SPACE FACULTY

Let’s learn about **satellites**!

Space mission and **satellite** design course

Space Mission Design Software

2NDSpace

What are Space Mission Design Software?

Designing space missions is hard.

For this reason, it is important to have some tools at our disposal to help during the design phase.

Mission Design Software are physics-based simulations that allow us to perform a variety of analyses from ground: we can compute how much fuel we need for a certain maneuver, check the ground plot of a satellite, even perform interplanetary missions!

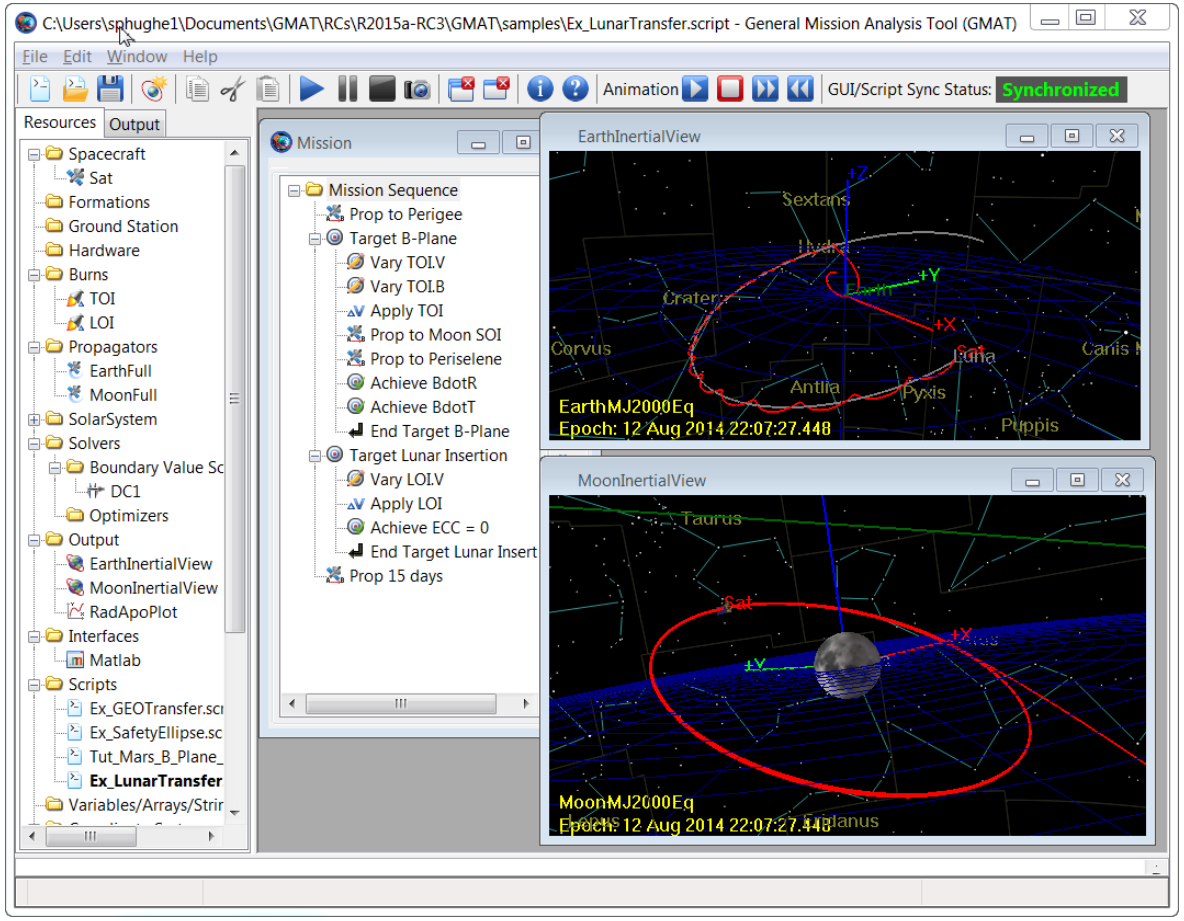

SPACE FACULTY
2NDSpace

When do we need these software?

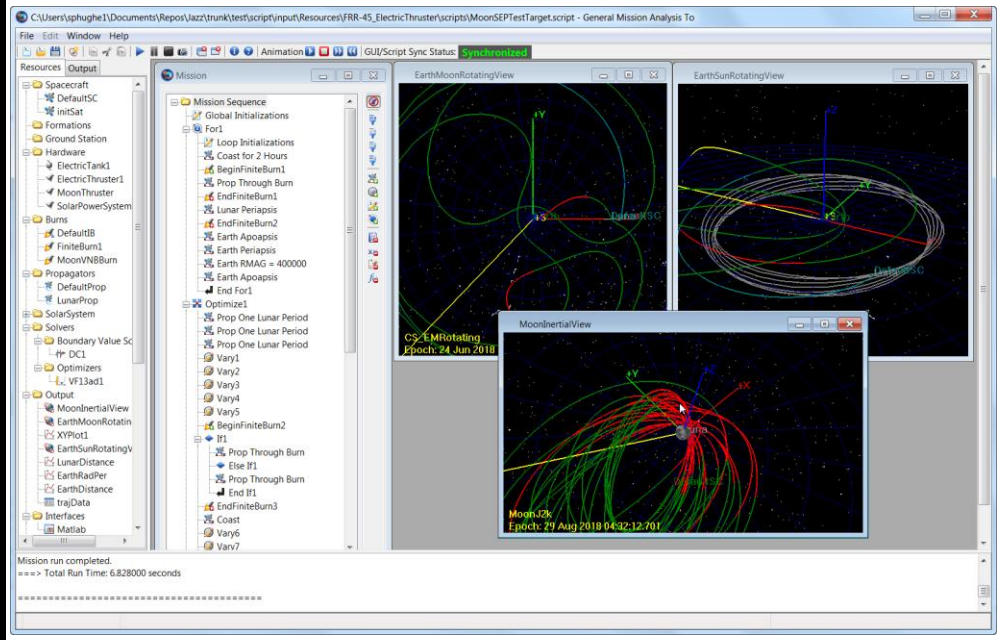

We can check before launch what kind of orbit do we need to meet mission requirements, perform analysis on the contacts with ground stations, compute how much time of the orbit is spent in eclipse (and so without power generation from the solar panels).

We can compute after launch when to perform a maneuver, and how much propellent we need.

SPACE FACULTY
2NDSpace

Popular Software – GMAT

The General Mission Analysis Tool (GMAT) is an open-source space mission analysis tool. Open-source also means that it is **free**!

GMAT is designed to model, optimize, and estimate spacecraft trajectories in flight regimes ranging from low Earth orbit to lunar applications, interplanetary trajectories, and other deep space missions.

Popular Software – MATLAB, Python and so on!

Sometimes, a company decides to put up the work to use internally written software in order to assess specific problems.

In this case, a company could have full control over the software used and be conscious about every step of the calculation.

A hybrid approach is also often utilized: the data obtained from mission design software is later put into external scripts to perform specific analyses. We will see how to do it later!

SPACE FACULTY
2NDSpace

We will learn about GMAT!

During this lesson, we will see how to use GMAT.

Being open-source, GMAT is **free to download and use.**

You can download it https://sourceforge.net/projects/gmat/

SPACE FACULTY
2NDSpace

Installing GMAT - Windows

The GMAT Windows distribution contains a zip file. When unzipped, locate the bin directory then select GMAT.exe to open GMAT.

You can also create a shortcut on desktop by right-clicking the program name and then click Send To > Desktop (Create Shortcut).

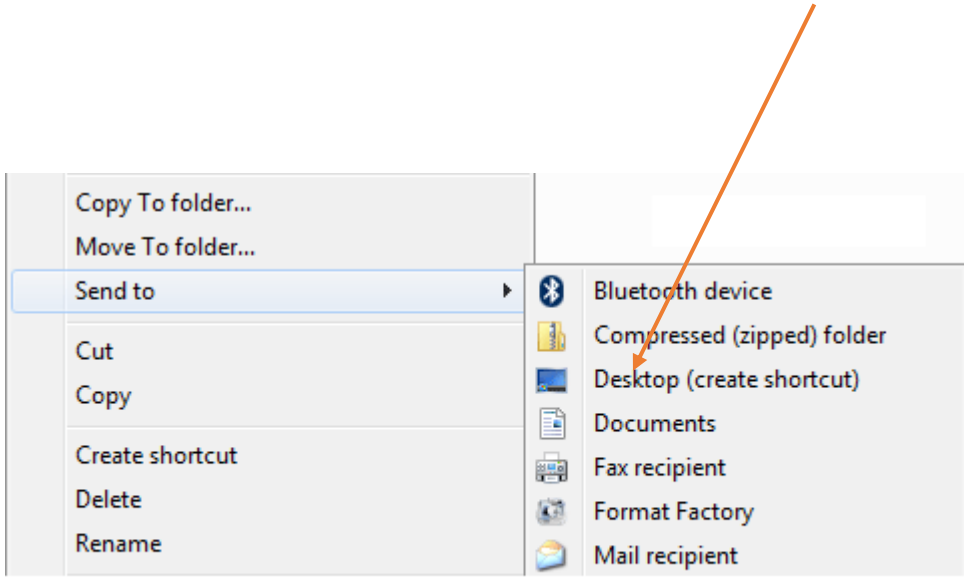

SPACE FACULTY
2NDSpace

Installing GMAT - MacOs

After downloading and mounting (i.e. opening) the dmg file, installation of GMAT is as simple as copying the resulting "GMAT <version>" folder to one of the following two locations:

- System-wide /Applications folder. This requires admin privileges.
- User's $HOME/Applications folder. Admin privileges are not needed.

Copying GMAT to any other location will result in an error on launch.

SPACE FACULTY
2NDSpace

GMAT – Welcome Page

At your first opening, you can see a welcome page that show you the most recent scripts you worked with, a getting started section and some useful links and resources.

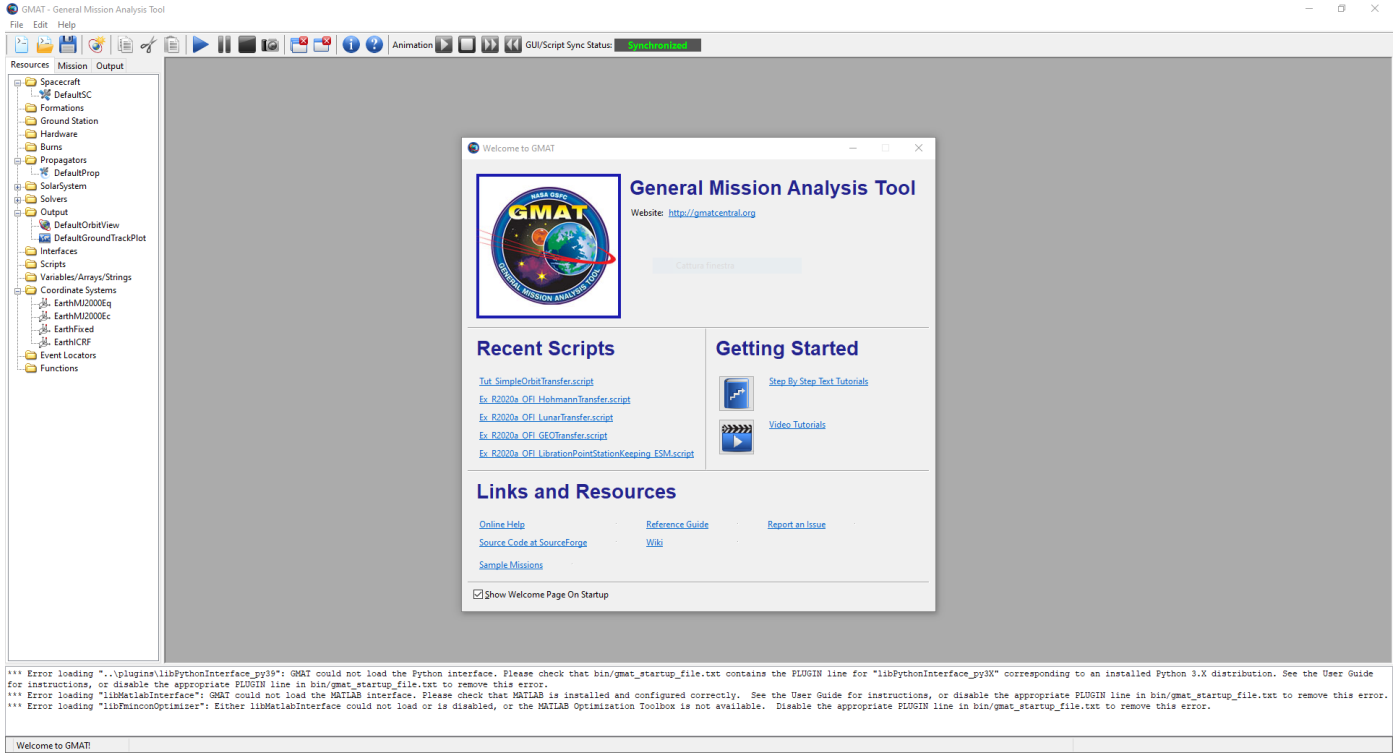

GMAT Documentation

If you click on the “Step by Step Tutorial” link on the welcome page, you will find a lot of useful resources to start learning.

We will do together a different tutorial from the one listed to highlight some of the things we have studied on previous lessons. But you could totally try the other tutorials!

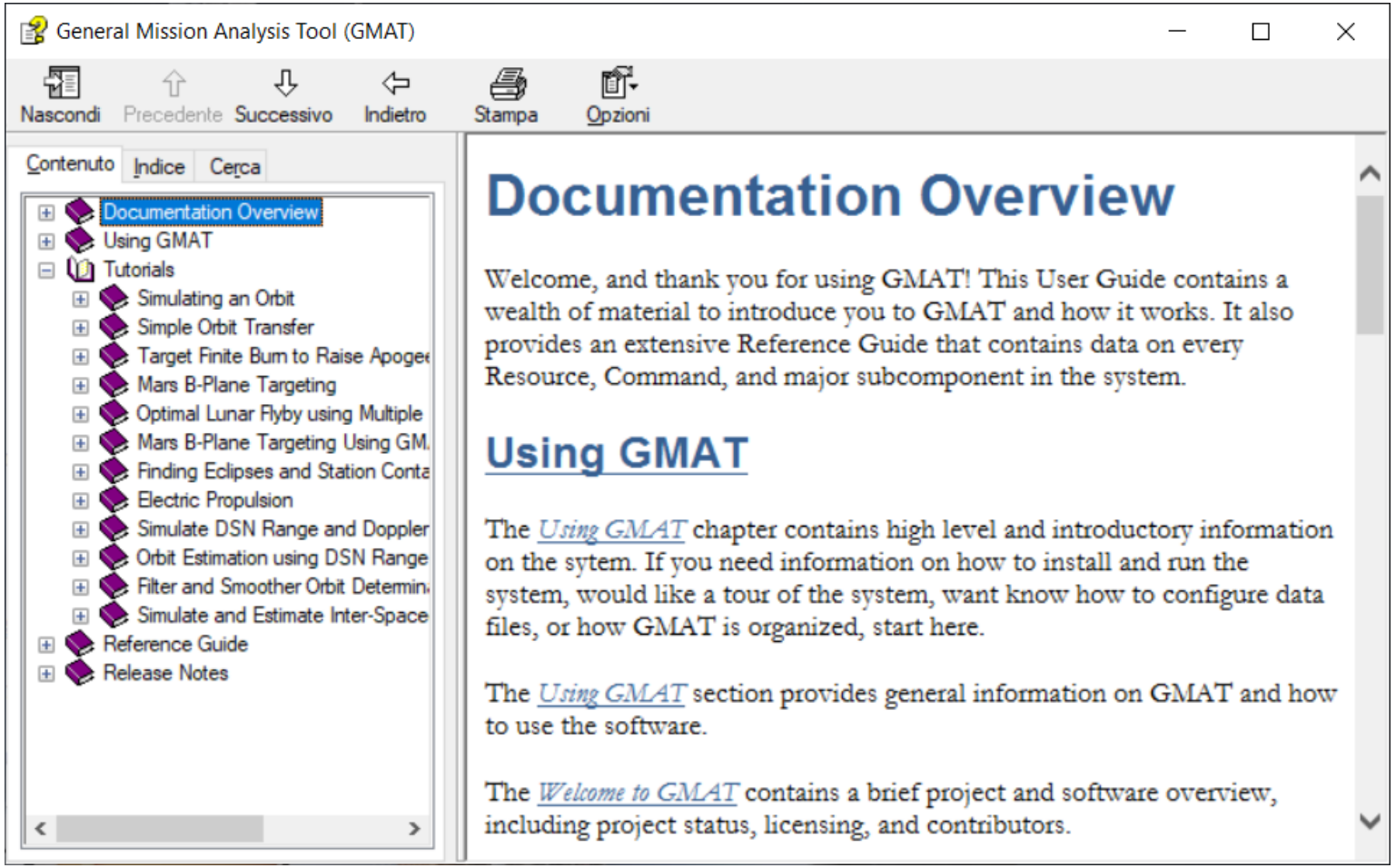

GMAT Interface -1

GMAT is driven by a GUI, or a Graphical User Interface.

This means that you can operate the software by navigating around with your mouse and you have visual feedbacks and indications.

In reality, the whole of GMAT is running in a script, a text document that experienced user can modify to work faster or for some specific applications.

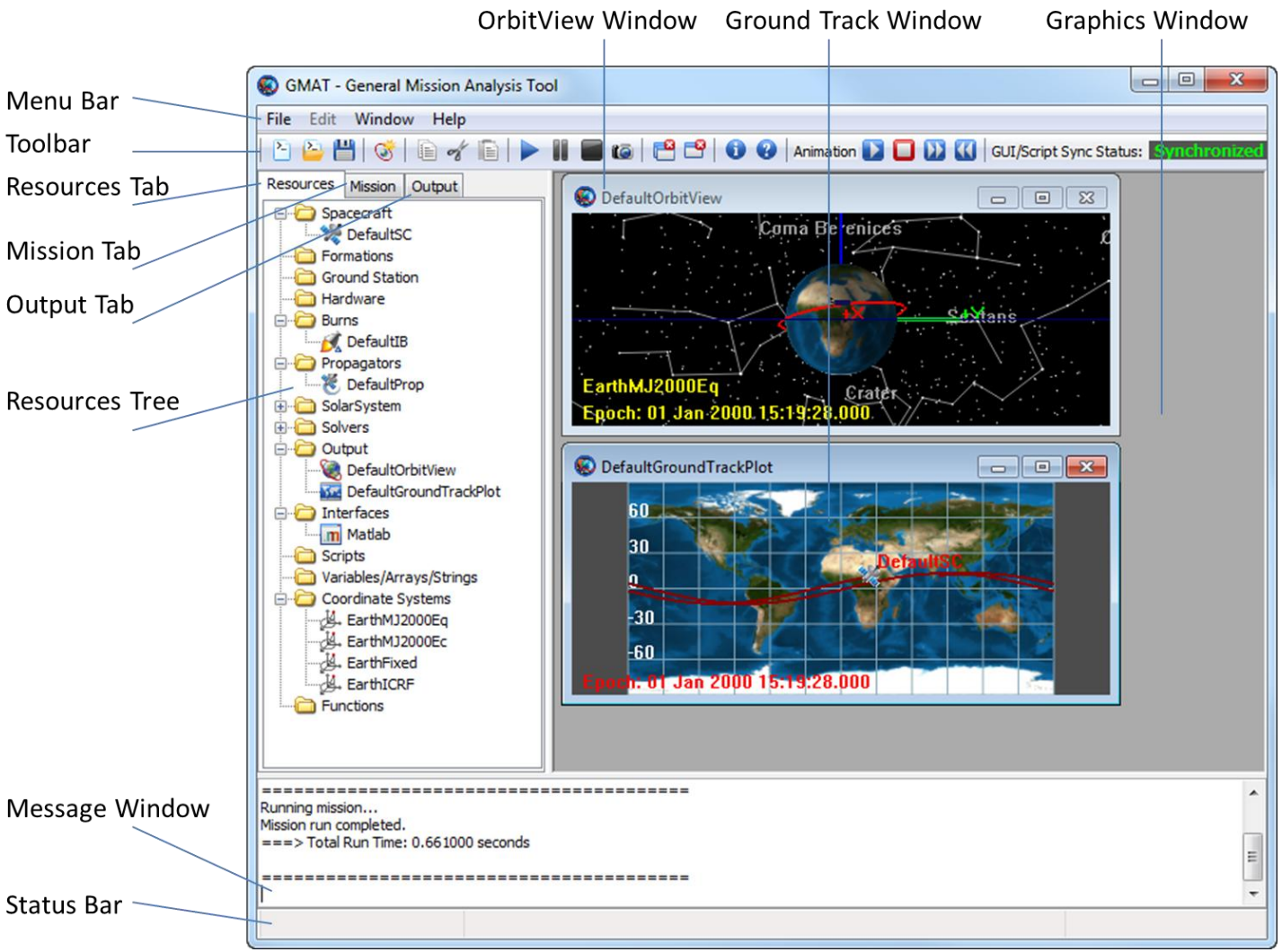

SPACE FACULTY
2NDSpace

GMAT Interface -2

First of all, GMAT is organized by three tab: the **resource**, **Mission** and **Output** tabs.

Over them, in the toolbar, you can save your project, run the simulation or control the animation.

On the right there is a graphic window, where you can see the graphical output of your work.

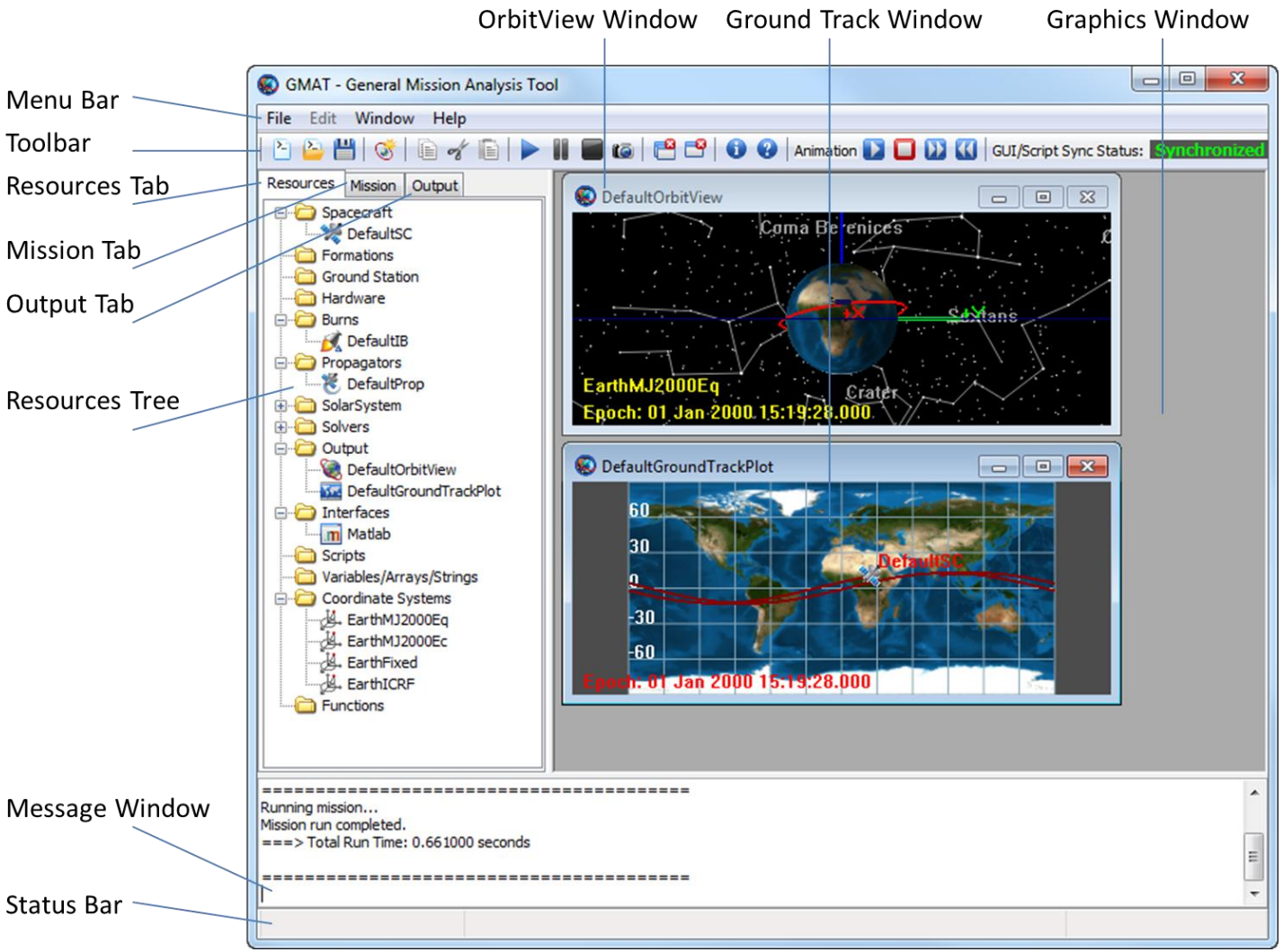

SPACE FACULTY
2NDSpace

Resource Tab

In the Resource Tab you have at your disposal all the objects that are used in the simulation.

Using the Resource Tree, you can add, edit, or delete most of the resources.

For example, you can add a Spacecraft by right-clicking the Spacecraft folder, or you can edit anything by double-clicking on it.

Note that some Default object can not be deleted, like the default coordinate systems and the default planetary bodies.

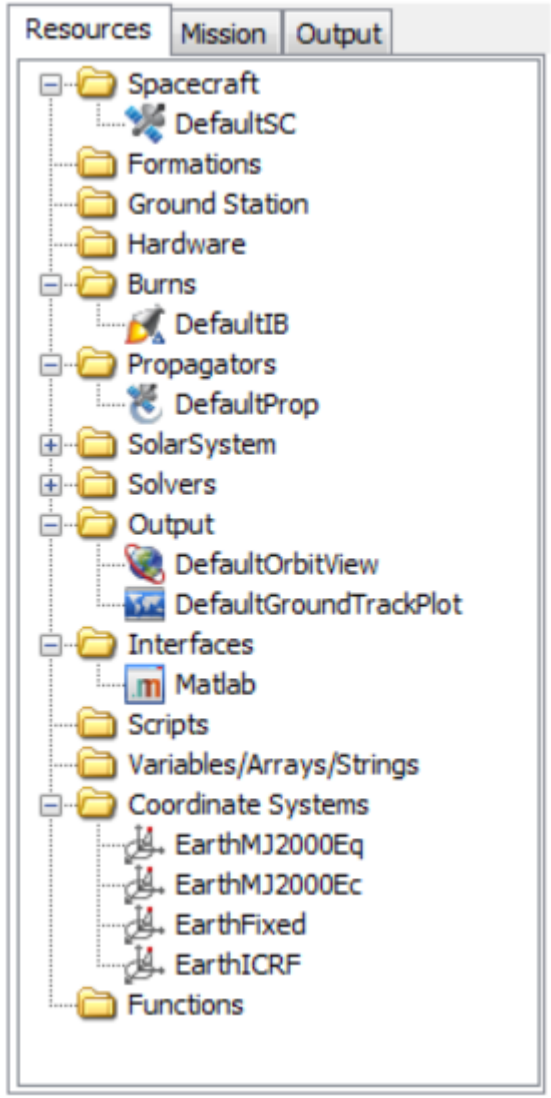

SPICE FACULTY
2NDSpace

Mission Tab

The Mission tree contain the Mission Sequence, or the exact **sequence of commands** to be executed to model your mission.

Here, on the upper-right image, we can see a complex case in which the mission is composed by lot of commands. Cases like these arise when we try to model some **maneuvers**.

Conversely, in the image at the bottom it is shown the default mission sequence. In general, for many Mission Design tasks, it is sufficient to propagate one orbit. For example, to obtain Eclipse information, ground coverage or detect contact with ground station it is sufficient to have a mission sequence identical to the one in the image in the bottom-right.

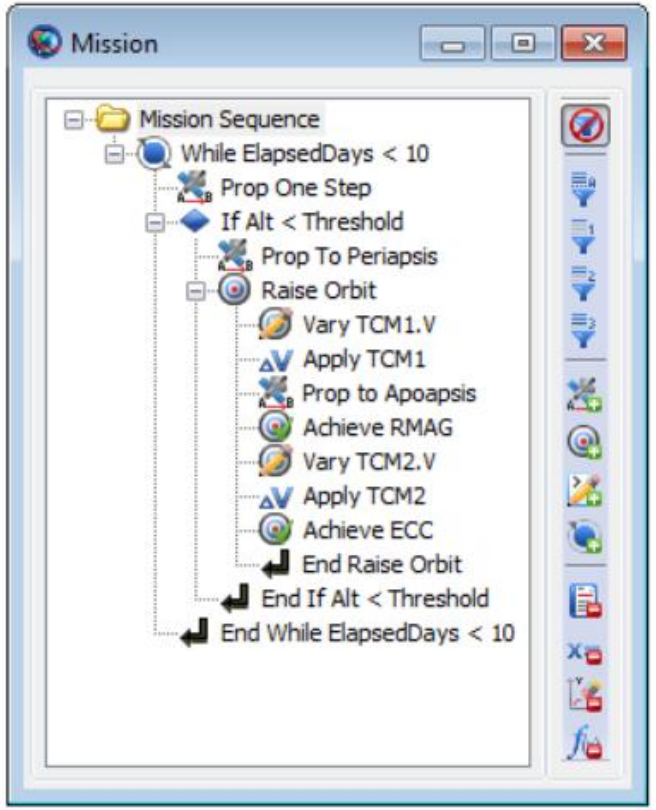

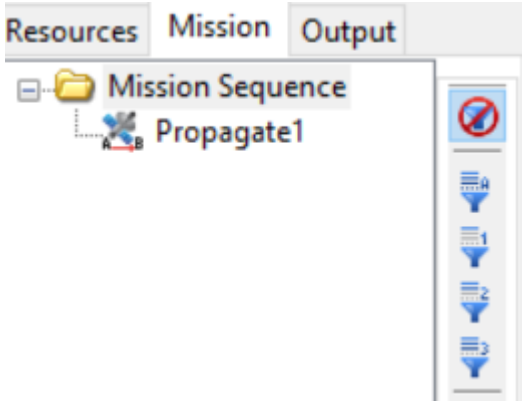

Output Tab

In the output tab are contained the results of our simulation, or, more precisely, the data file and the plots produced by GMAT using the result of the simulation. Since we can obtain a huge amount of information from the software, it is convenient to be able to select what we want to see. In other words, we are telling the software what it should display us.

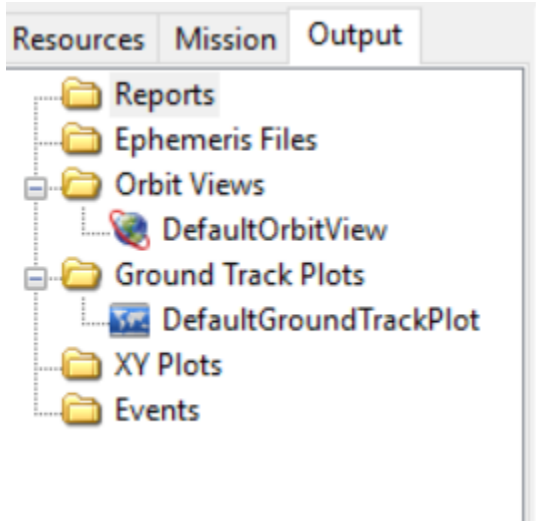

The Output Tab is not editable in the same way as the resource tab: you still have to set-up and edit your outputs in the resource tab, that contains a dedicated output folder. We will see together how to set up new outputs and how to modify the Default ones.

SPACE FACULTY
2NDSpace

Orbit Viewer and Ground Track Plot

These are two outputs that are included in the default mission.

The first one is an **animated 3D-visualization** of the orbit, while the second is the **Ground Track Plot** of the satellite.

They're really useful: they give the user visual clues about whether the mission has been set up correctly or not.

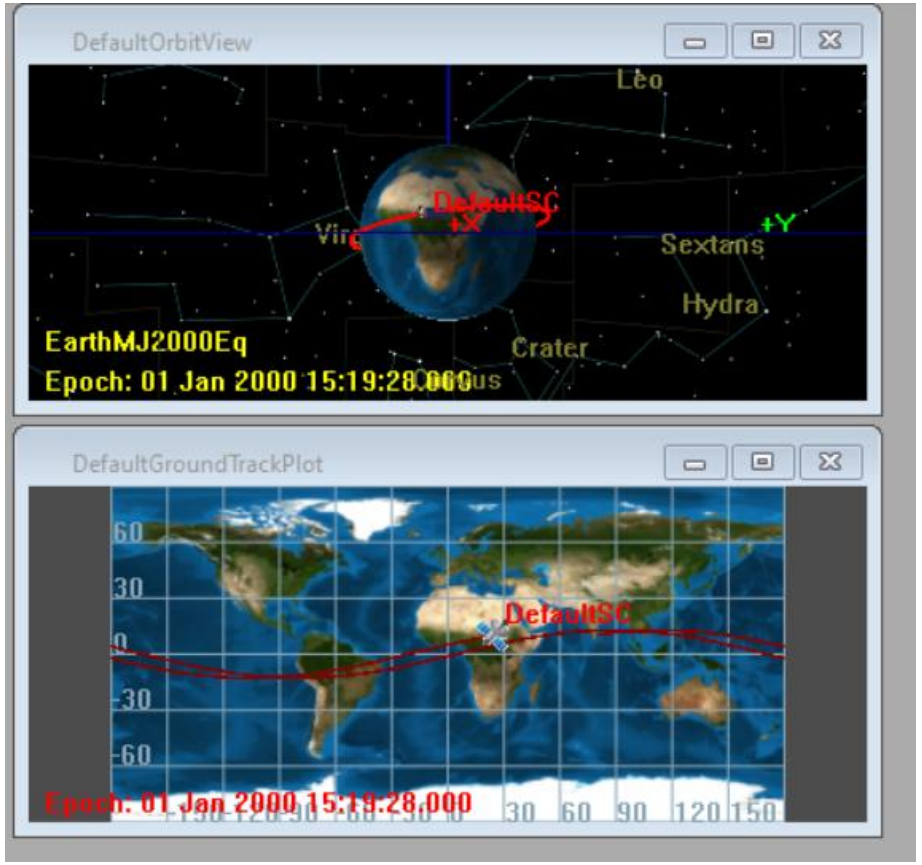

SPACE FACULTY
2NDSpace

The Default Mission

What does it mean that we have a Default Mission? Explore the tabs.

In the Resources tab we have:

- A Default Spacecraft, that is obviously necessary for every simulation.

- A Default Propagator, that is the entity that is able to propagate the satellite orbit in time.

In the Mission tab we have:

- A Propagate command, so that the software know to propagate something when you run it.

In the Output tab we have:

- A Default Orbit Viewer.

- A Default Ground Track Plot.

Run your first simulation!

Since the Default mission is already loaded, it is easy to run your first space mission: you just need to click the run button!

After the simulation is completed, you can play the animation back by using the animation control commands. You can also slow down the animation if you want to see it better.

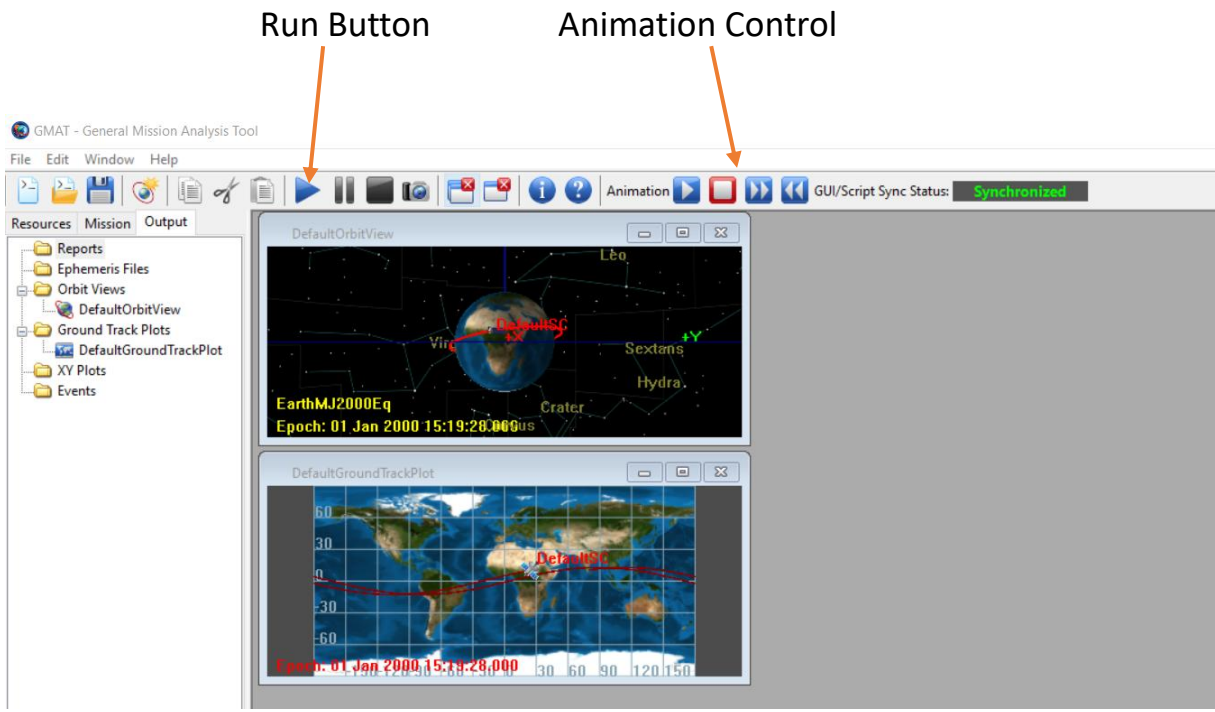

SPACE FACULTY
2NDSpace

Your first Custom Mission - 1

Now, we can customize the Default Mission.

First of all, right-click on the DefaultSC in the resource tab to rename it. Name your satellite as you want. We will call it **SpaceFacultySat**.

Now double click on the Spacecraft resources and change the parameters as in the image.

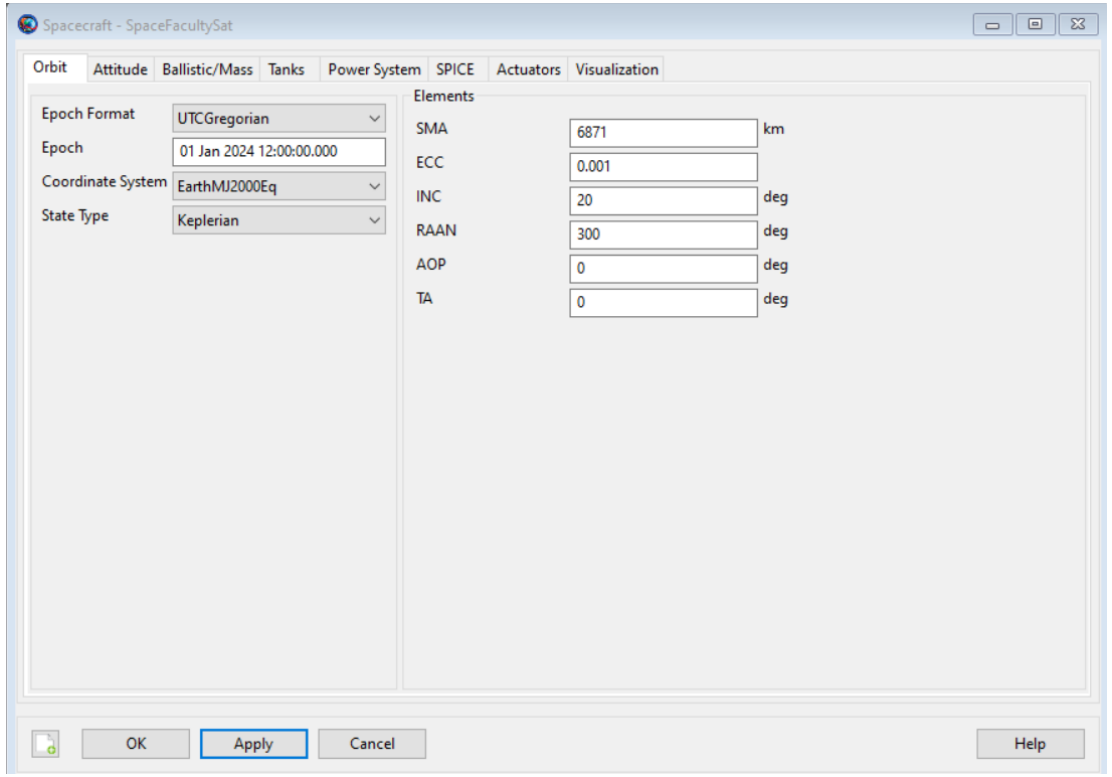

2NDSpace

Your First Custom Mission - 2

What did we change?

Epoch Format: we have several ways of telling the time and here we have to select one of them. We set the format to UTCGregorian since it is easy to understand and to work with.

Epoch: the time at which our simulation start. We set it to the first of January 2024 at twelve o'clock.

Coordinate system: we also have several ways to describe the position of an object in space. This is not so important for us now, so we keep the default value.

State Type: This is to select the way in which we tell the software the starting position of our satellite. In this case, we will use the Keplerian Elements, since we already talked about them in our lessons.

Elements: these are the values of the Keplerian Elements.

SPACE FACULTY
2NDSpace

Your first Custom Mission - 3

What are the Keplerian Elements?

- **SMA**: Semi Major Axis. We have seen it during the lesson about orbits: it represents how big our orbit is. In this case, we want to simulate a LEO (Low Earth Orbit) Orbit, so we set this value to 6871 km.

- **ECC**: Eccentricity. We have seen it during the lesson about orbits: it represents how eccentric our orbit is. If this value is close to zero, the orbit is almost circular. We set it to 0.001 to have an almost circular orbit.

- **INC**: Inclination. We have seen it during the lesson about orbits: it represents how much the orbit is inclined with respect to the equatorial plane. For now, we set this value to 20 deg.

- **RAAN**: Right Ascension of Ascending Nodes. It describes how the orbit is oriented in space. We set it to 300 deg.

- **AOP**: Argument of Perigee. It describes in which direction the periapsis of the orbit is oriented. We set it to 0, and it is not relevant for the rest of the lesson.

- **TA**: True Anomaly. It describes at which point of the orbit the satellite is. We set it to 0, and it is not relevant for the rest of the lesson.

SPACE FACULTY
2NDSpace

Your first Custom Mission - 3

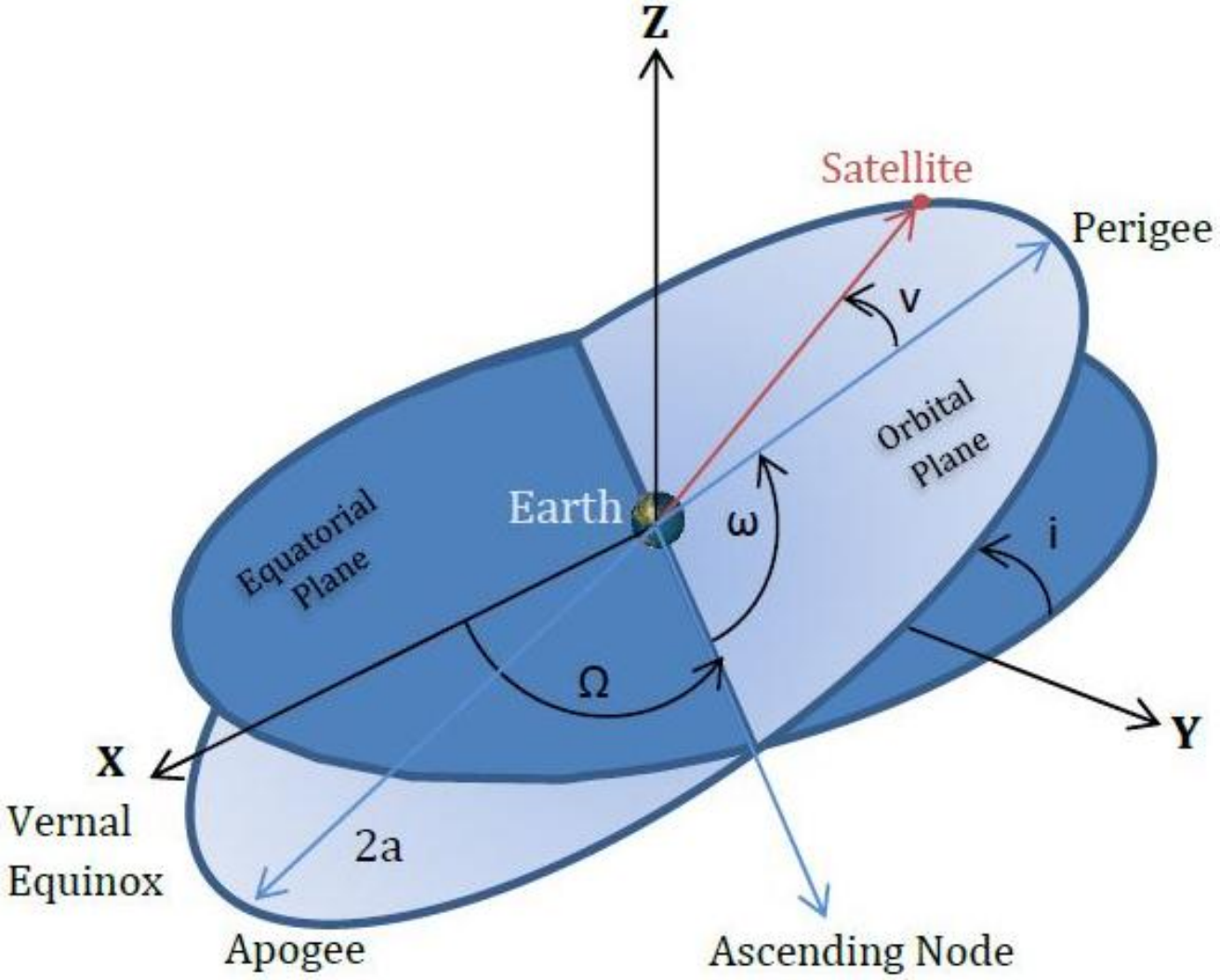

SPACE FACULTY
2NDSpace

Your first Custom Mission - 4

Double-clicking the Default Propagator, we can edit also its characteristics.

We won't change anything here, but note that the propagator is able to account for all the perturbations we have seen in our previous lesson. You can see that there is a section for the Drag and one for the Solar Radiation Pressure.

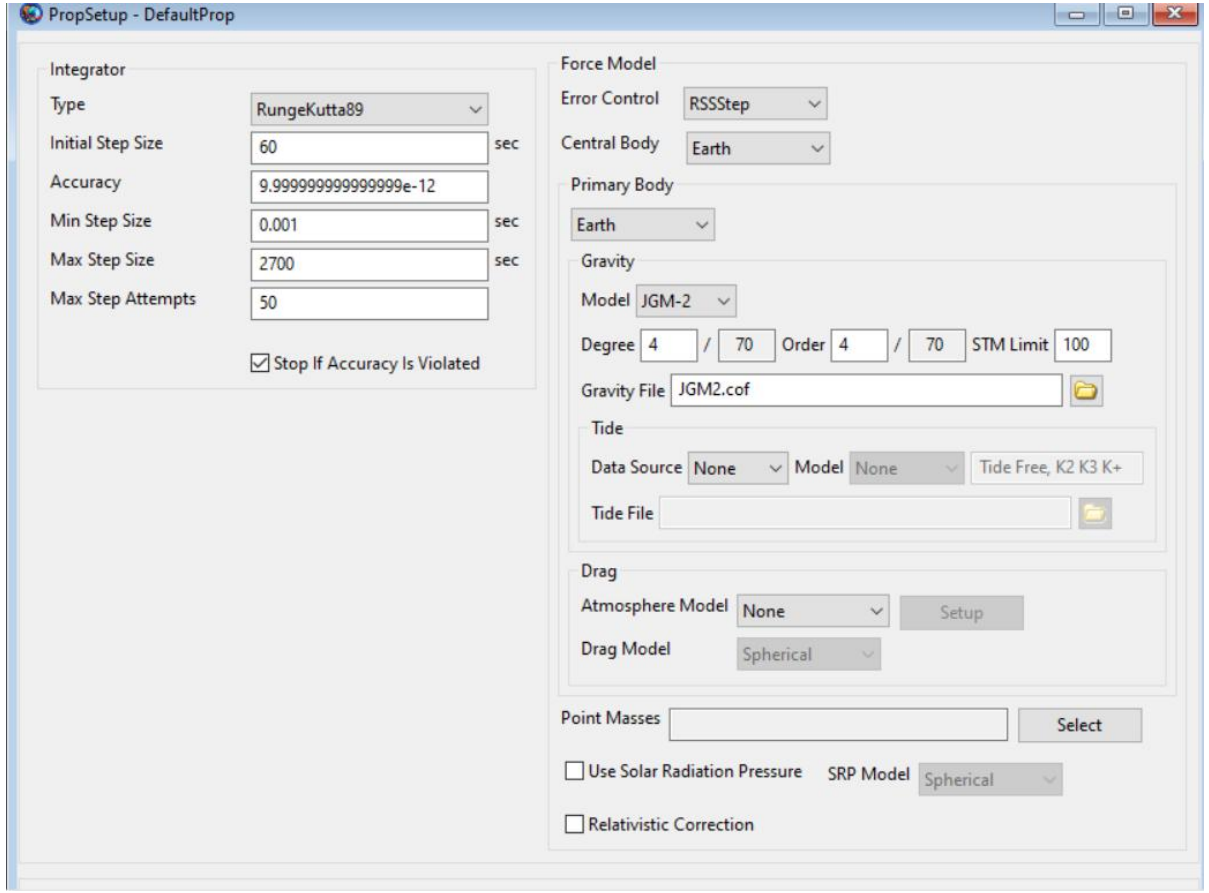

SPACE FACULTY
2NDSpace

Your first Custom Mission - 5

Now go in the mission tab: we are going to modify also the propagate command. Double click it: you'll see a window that contains two sections.

The first one, *Propagators and Spacecraft*, is the one in which you can assign a spacecraft to one of your existing propagators. We won't do any change here now.

The Second one, *Stopping Conditions*, tells the software when to stop. We want to change it!

In the column *Parameter* you can decide which parameter will trigger the stop of the simulation. In *Condition* we set at which value of the selected parameter the software should stop. In the Default case, the simulation will stop when the Elapsed Seconds are equal to 12000.

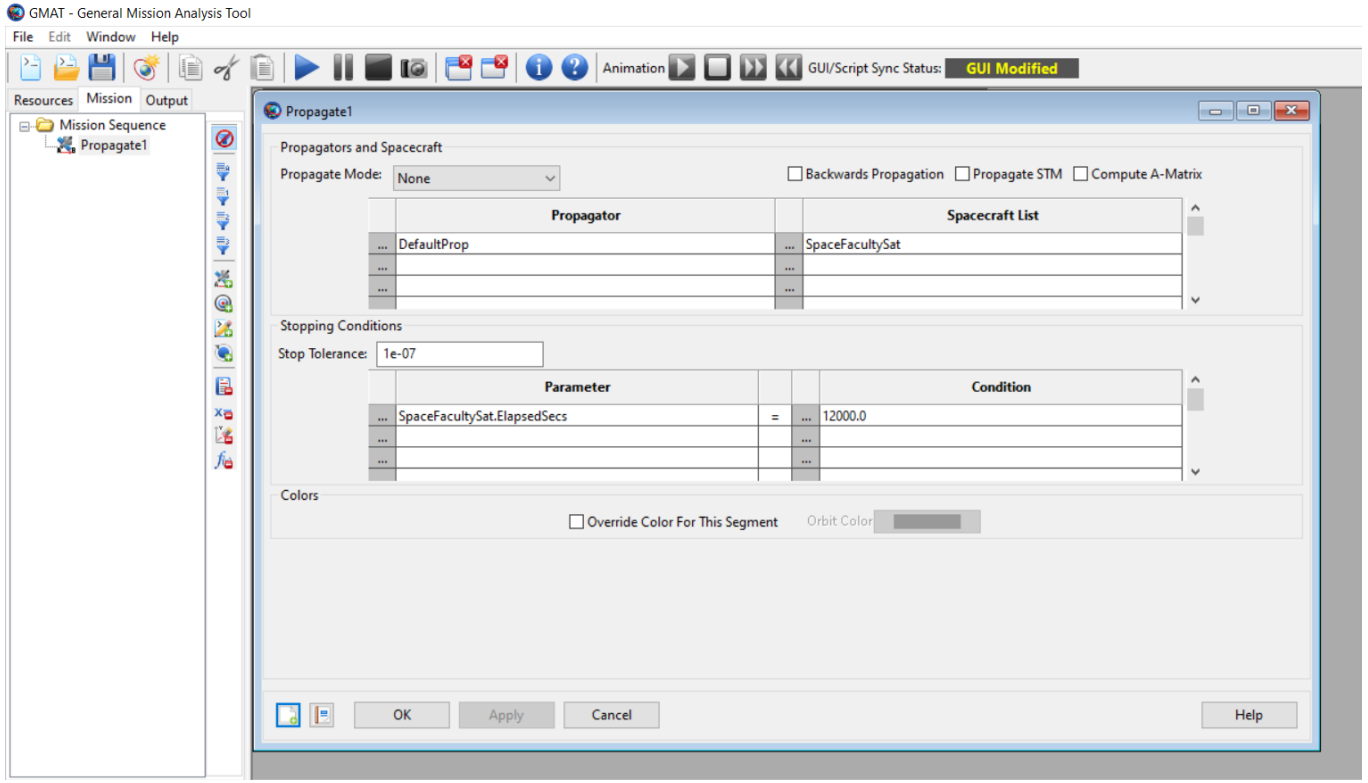

Your first Custom Mission - 6

Click on the three dots on the left of SpaceFacultySat.ElapsedSecs. Doing so, you will open a list of object properties that you can select.

Search for Elapsed Days, double click on it and click ok. Then, type 1 in the Condition column : we want the simulation to stop after one day.

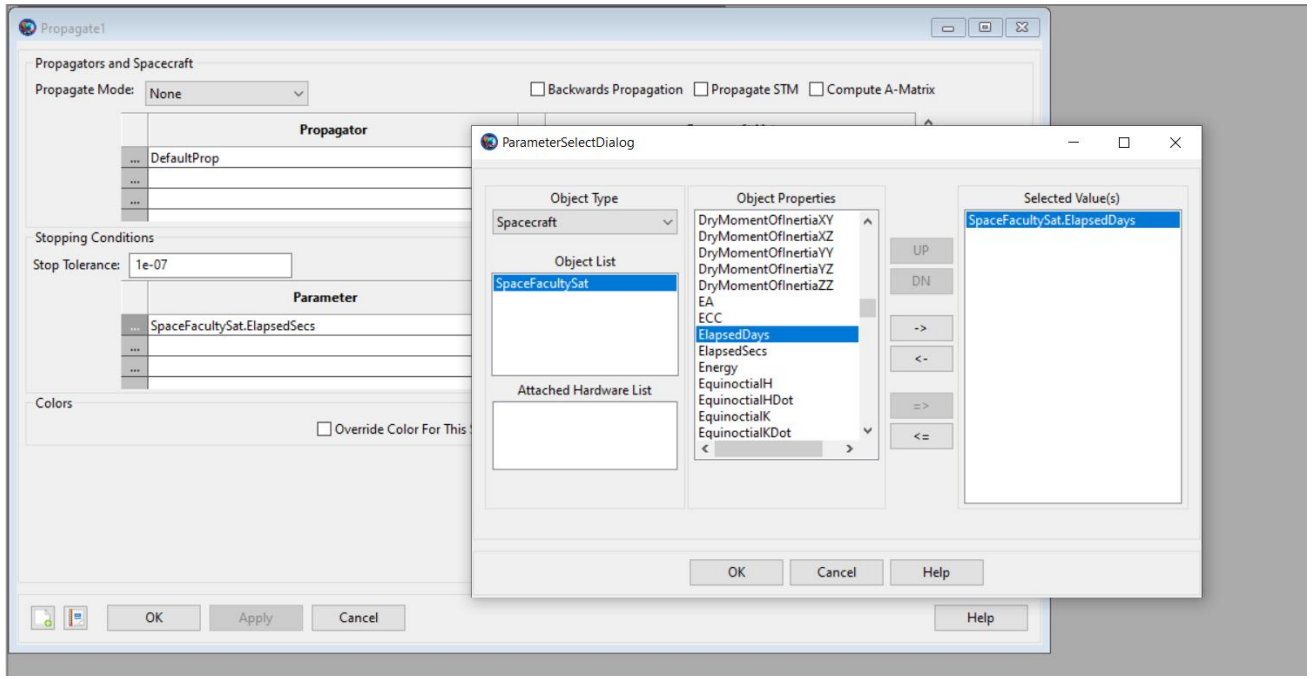

Your first Custom Mission - 7

Now Run Your Mission!

You will notice that the orbit is different than the default one, and that you will simulate a lot more orbits, since we told the propagator to go on for an entire day.

If you want to have a better view of your orbit, you can move the 3D Orbit View with your mouse.

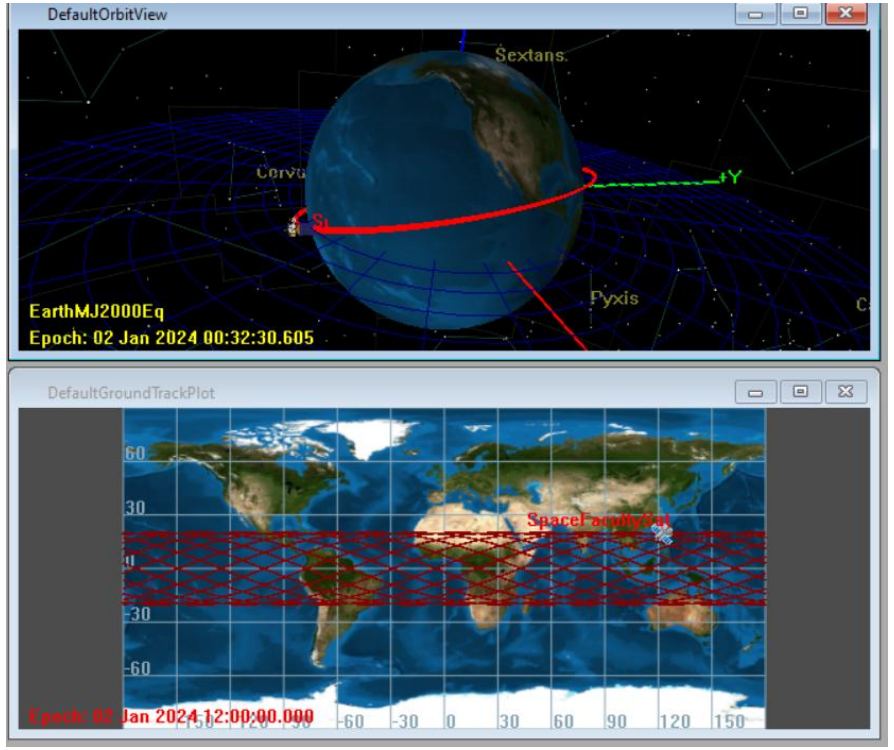

2NDSpace

Exercise - 1

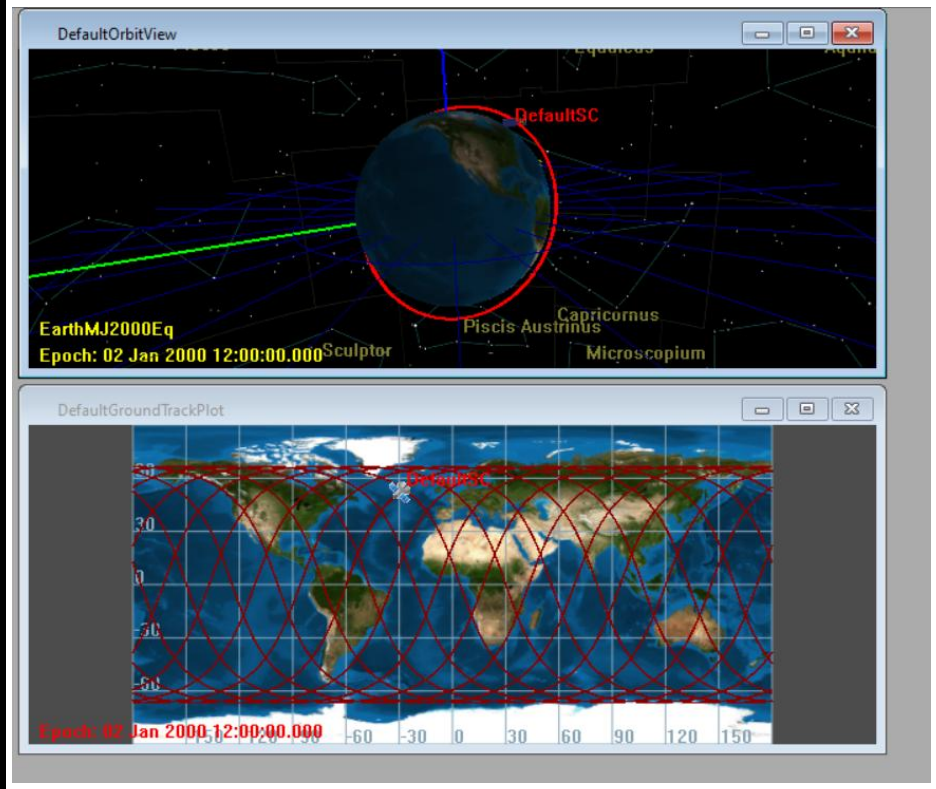

Since we have talked a lot about Inclination and Eccentricity, try to change the values and see what happens to the orbit. Remember that Inclination values are between 0 and 90 and Eccentricity values are between 0 and they should be less than 1.

The image on the left is obtained with inclination equal to 60 deg. Try also 0 and 90!

2NDSpace

How to get useful results - 1

A lot of the times the results from GMAT are analyzed using other softwares, like MATLAB or Excel.

We can tell the software to give us exactly what we need by adding an output to the simulation.

Go in the resources tab, right click on the output folder and add a report file. A window like the one on the right should open. First, rename the ReportFile as you wish. Then, click edit on the parameter list to decide what we want to save in this file we are creating.

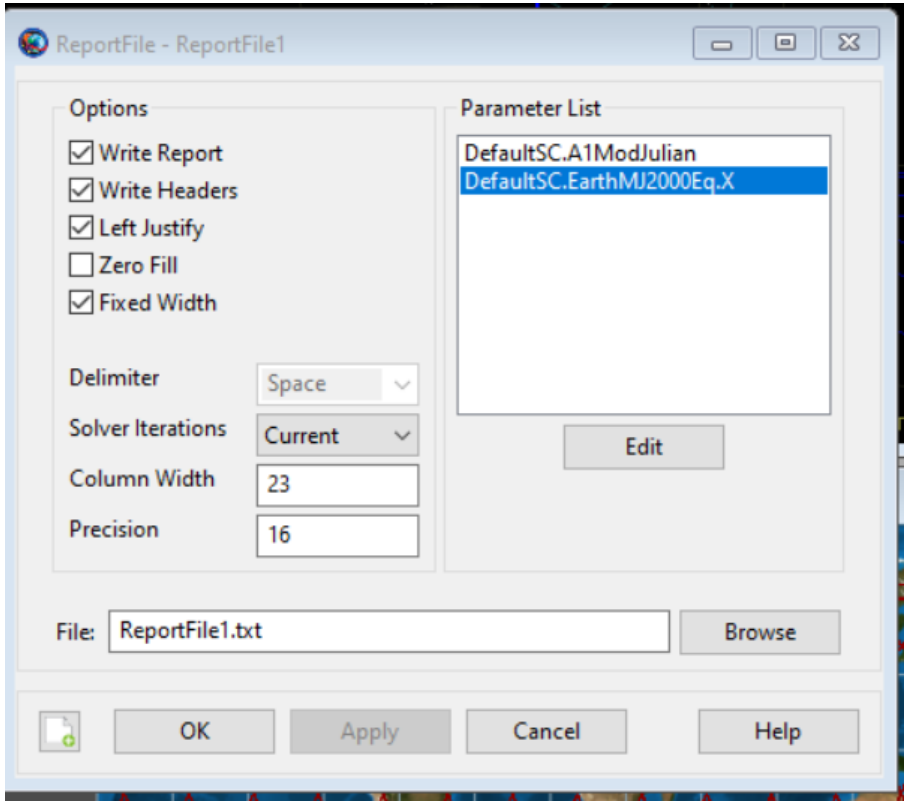

SPACE FACULTY
2NDSpace

How to get useful results - 2

Now you can select which parameters should be in the Report File. Select the ones already on the right and use the left-pointing arrow button to remove them from the list.

Then, we want to search in the list for UTCGregorian, ElapsedSecs, SMA and TA and add them to the selected values using the right-pointing arrow button.

To add a parameter

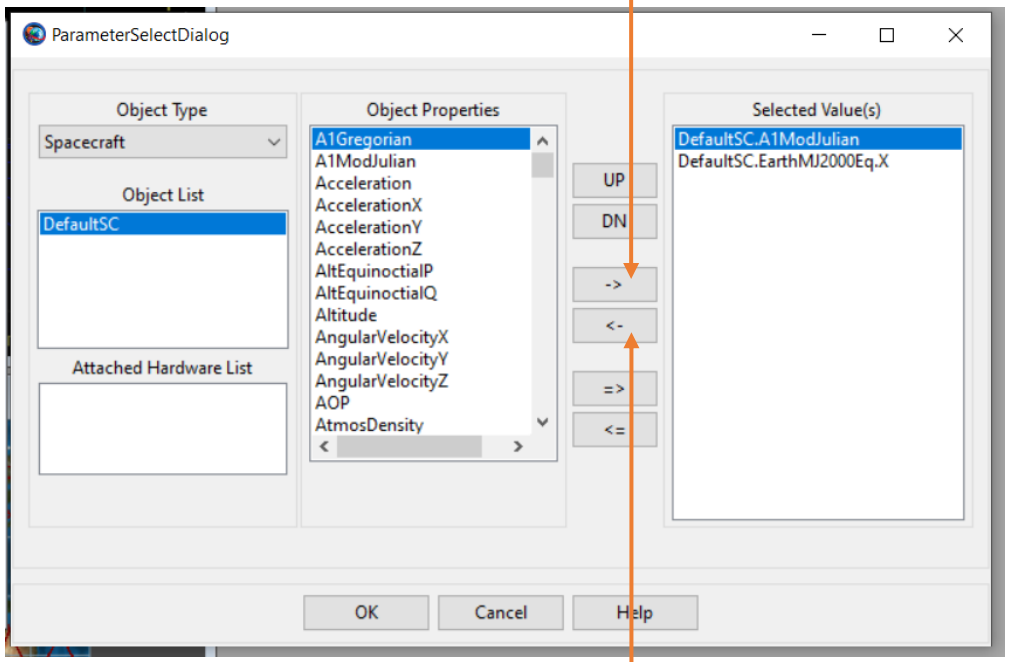

To remove a parameter

How to get useful results - 3

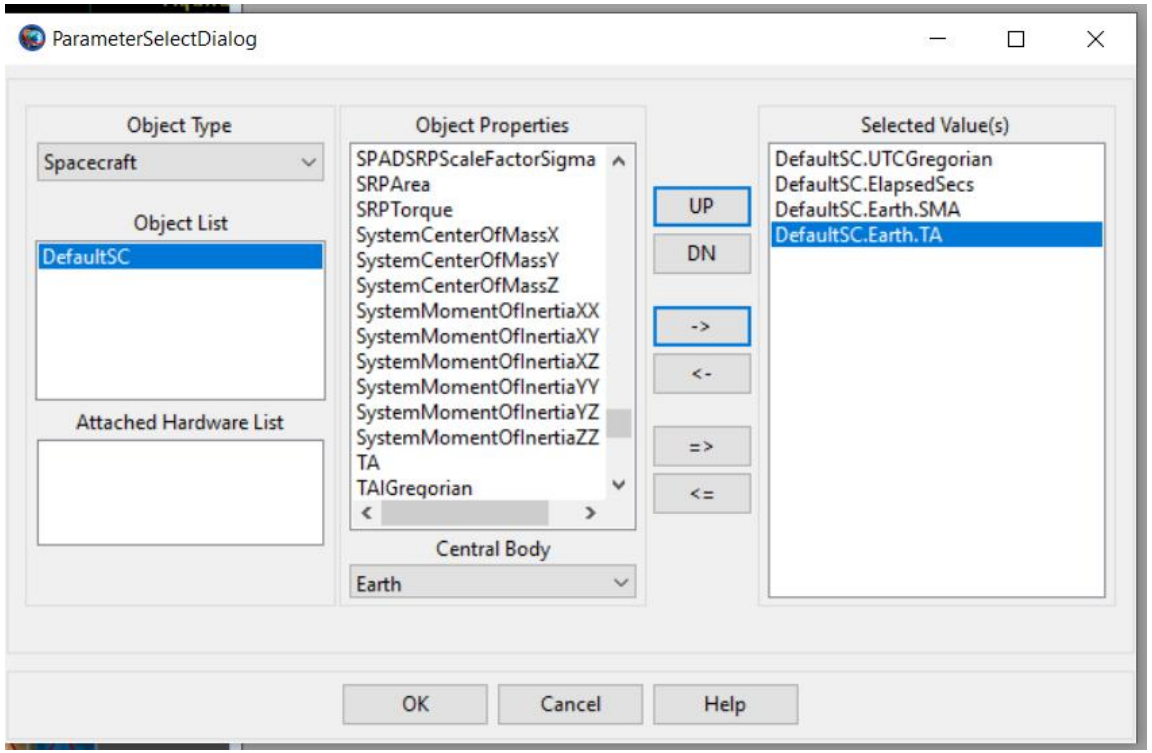

The result should look like in the figure. Click ok, apply the changes and click ok again.

Now, run the simulation again.

How to get useful results - 4

If you go now in the output tab, you can see that there is something new: a ReportFile!

If you double click on it, you can view the values of the selected parameters. Then, the file is also stored in the GMAT folder, in a sub-folder named output. The file can then be opened and used with lot of third party software.

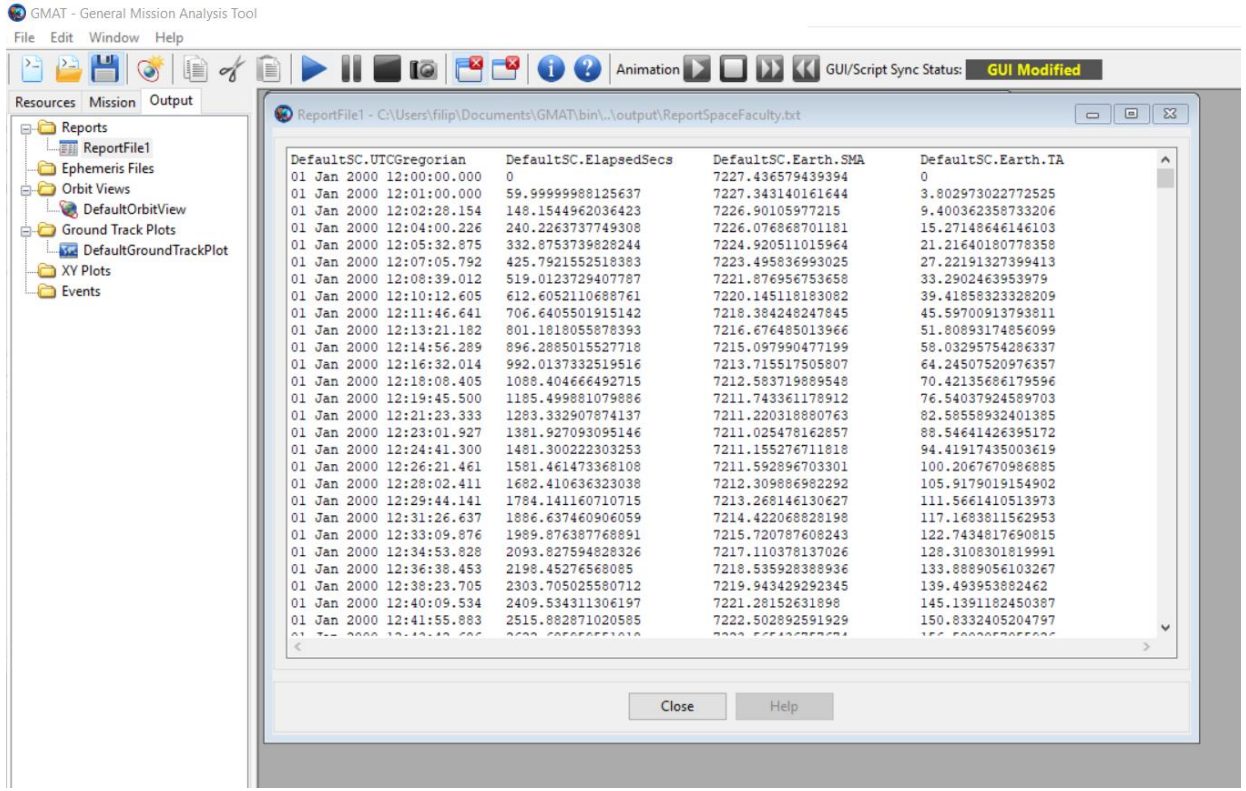

DefaultSC.UTCGregorian	DefaultSC.ElapsedSecs	DefaultSC.Earth.SMA	DefaultSC.Earth.TA
01 Jan 2000 12:00:00.000	0	7227.436579439394	0
01 Jan 2000 12:01:00.000	59.99999988125637	7227.343140161644	3.802973022772525
01 Jan 2000 12:02:28.154	148.1544962036423	7226.90105977215	9.400362358733206
01 Jan 2000 12:04:00.226	240.2263737749308	7226.076868701181	15.27148646146103
01 Jan 2000 12:05:32.875	332.8753739828244	7224.920511015964	21.21640180778358
01 Jan 2000 12:07:05.792	425.7921552518383	7223.495836993025	27.22191327399413
01 Jan 2000 12:08:39.012	519.0123729407787	7221.876956753658	33.2902463953979
01 Jan 2000 12:10:12.605	612.6052110688761	7220.145118183082	39.41858323328209
01 Jan 2000 12:11:46.641	706.6405501915142	7218.384248247845	45.59700913793811
01 Jan 2000 12:13:21.182	801.1818055878393	7216.676485013966	51.80893174856099
01 Jan 2000 12:14:56.289	896.2885015527718	7215.097990477199	58.03295754286337
01 Jan 2000 12:16:32.014	992.0137332519516	7213.715517505807	64.24507520976357
01 Jan 2000 12:18:08.405	1088.404666492715	7212.583719889548	70.42135686179596
01 Jan 2000 12:19:45.500	1185.499881079886	7211.743361178912	76.54037924589703
01 Jan 2000 12:21:23.333	1283.332907874137	7211.220318880763	82.58558932401385
01 Jan 2000 12:23:01.927	1381.927093095146	7211.025478162857	88.54641426395172
01 Jan 2000 12:24:41.300	1481.300222303253	7211.155276711818	94.41917435003619
01 Jan 2000 12:26:21.461	1581.461473368108	7211.592896703301	100.2067670986885
01 Jan 2000 12:28:02.411	1682.410636323038	7212.309886982292	105.9179019154902
01 Jan 2000 12:29:44.141	1784.141160710715	7213.268146130627	111.5661410513973
01 Jan 2000 12:31:26.637	1886.637460906059	7214.422068828198	117.1683811562953
01 Jan 2000 12:33:09.876	1989.876387768891	7215.720787608243	122.7434817690815
01 Jan 2000 12:34:53.828	2093.827594828326	7217.110378137026	128.3108301819991
01 Jan 2000 12:36:38.453	2198.45276568085	7218.535928388936	133.8889056103267
01 Jan 2000 12:38:23.705	2303.705025580712	7219.943429292345	139.493953882462
01 Jan 2000 12:40:09.534	2409.534311306197	7221.28152631898	145.1391182450387
01 Jan 2000 12:41:55.883	2515.882871020585	7222.502892591929	150.8332405204797

How to find events - 1

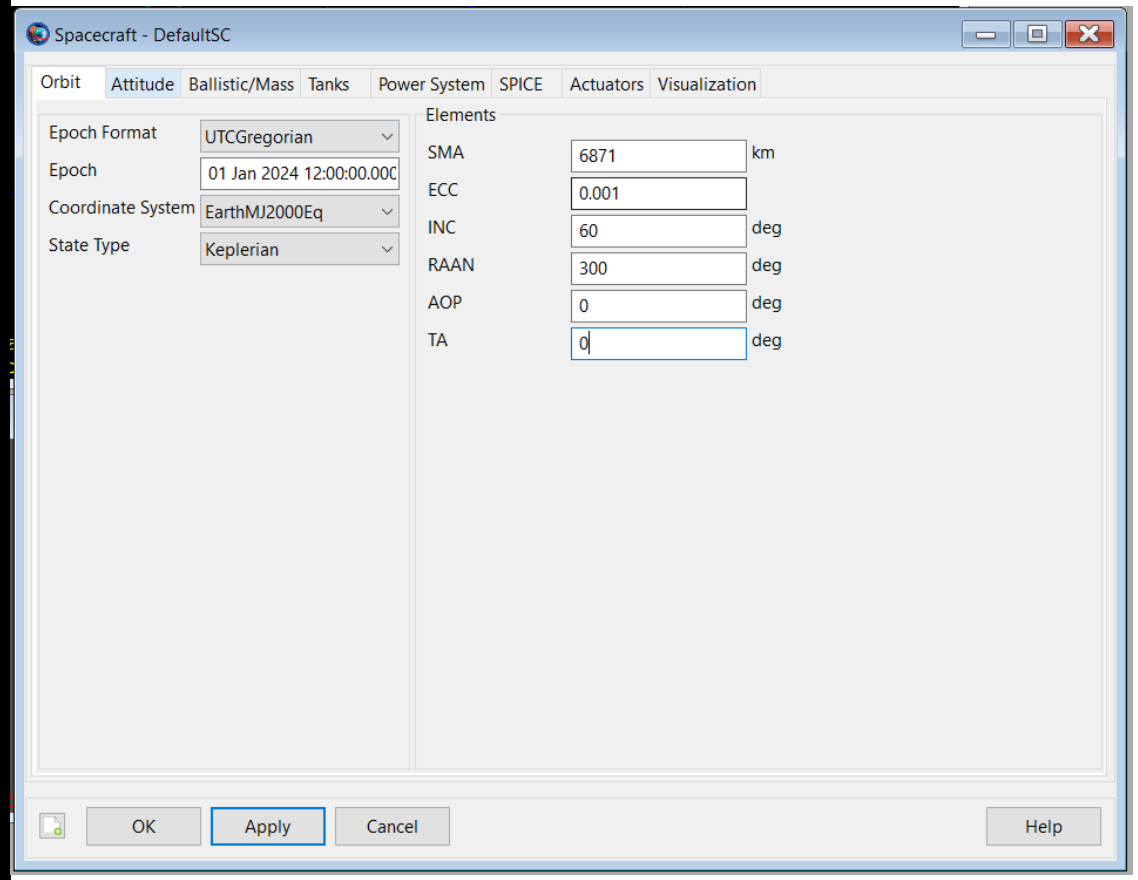

First, we need to be on the same page after all of the experimenting. So, set up the spacecraft to have the same values as in the image on the right.

Now, we will see how to locate important events, like eclipse and ground station contacts.

Can anyone remember why eclipses and ground station contacts are important?

How to find events - 2

In the Resources Tab, right click on Event Locator, then select an Eclipse **Locator**.

Then repeat the process to add a **contact locator**.

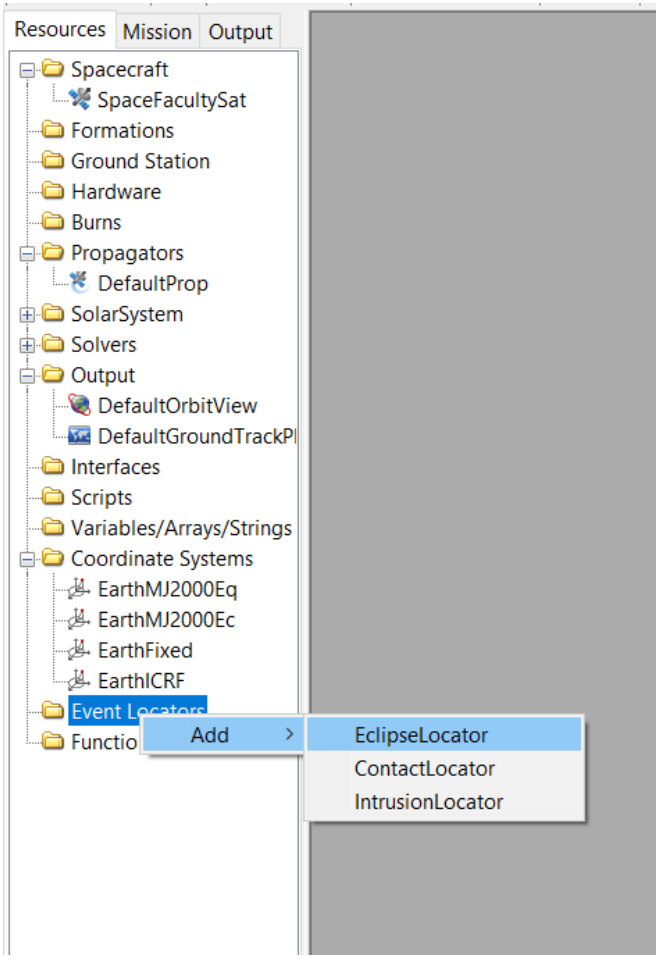

SPACE FACULTY
2NDSpace

How to find events - 3

We start by setting up the **Eclipse Locator**. Double- Click the Eclipse Locator and check that the values are the same as in the image. As you can see, you can set which occulting bodies to consider. Since we are orbiting around Earth, we need to consider only the shadows cast by Earth and Moon.

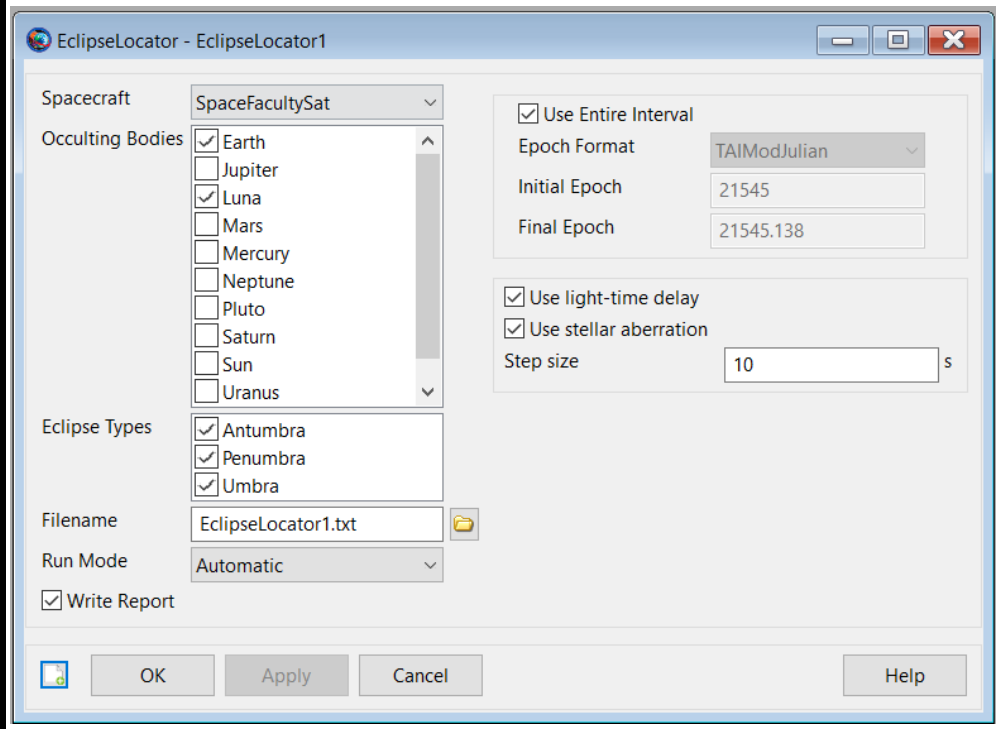

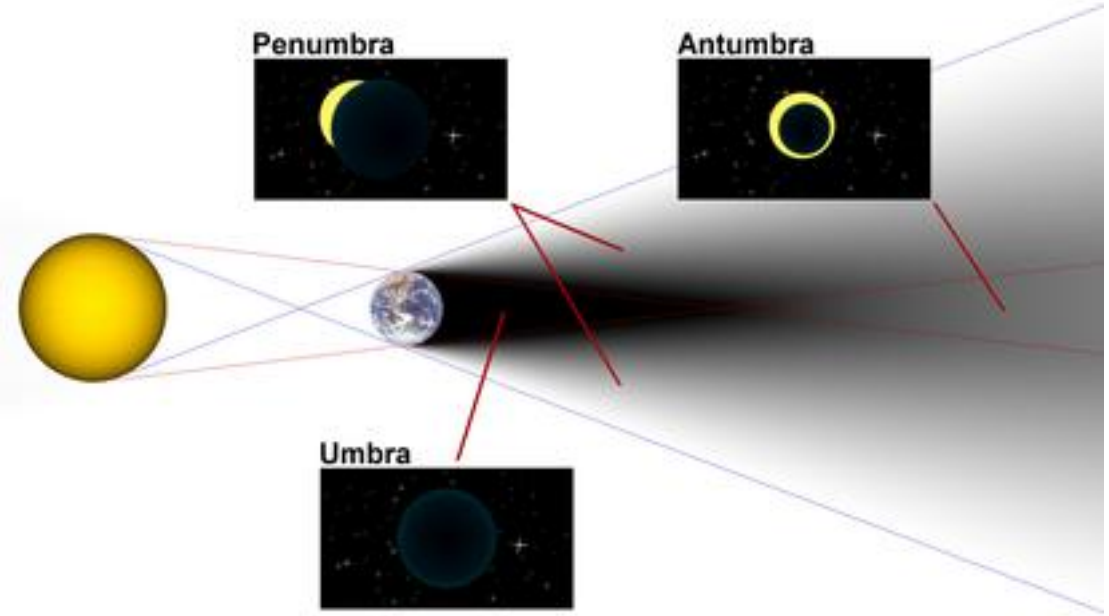

How to find events - 4

To find a contact event with a ground station, we need first to tell GMAT where our ground station will be.

Right click on the ground station folder in the Resource Tab. Add a new ground station and rename it Singapore.

Now, modify the Horizon Reference to the value Sphere, so we can type in the values of latitude and longitude of Singapore.

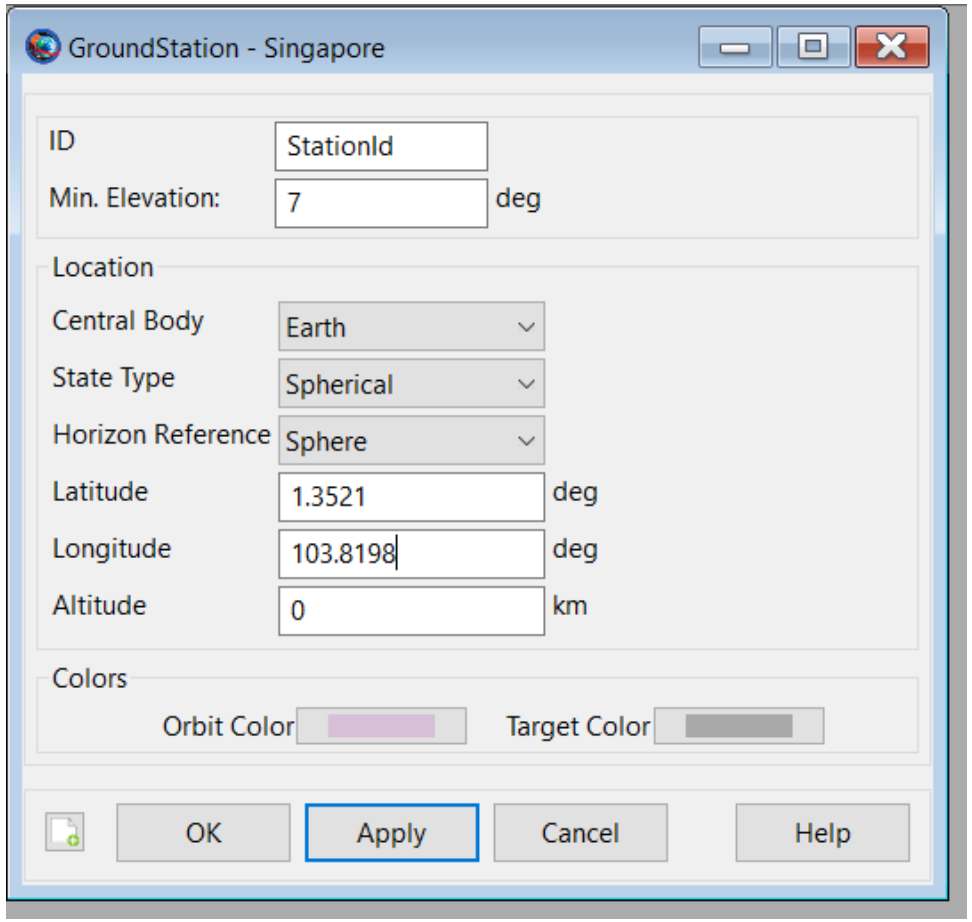

SPACE FACULTY
2NDSpace

How to find events - 5

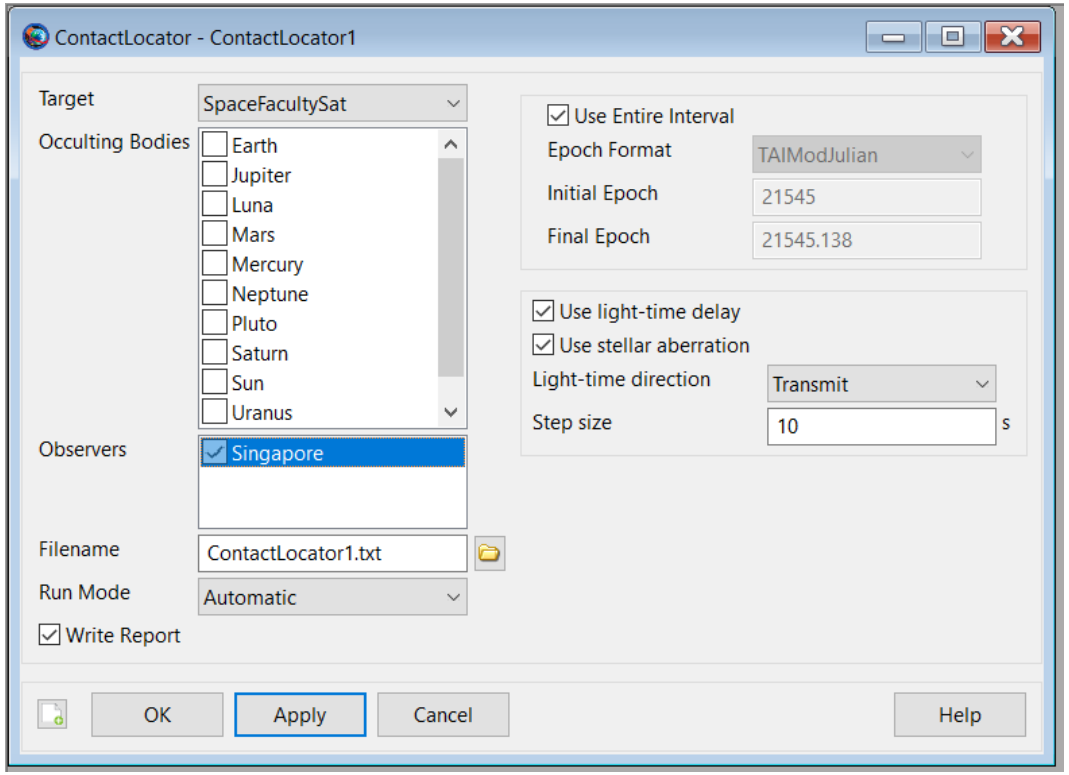

Now we need to set-up the contact locator. We need to select the Singapore Ground Station as an Observer. Note that we do not have to include Earth as an occulting body since the software automatically consider the occultation of the central body of the ground station.

Now you can run the mission again!

How to find events - 6

If you go now to the output tab, you will see that we have two new outputs: an Eclipse Locator and a Contact Locator.

Double Click on the Eclipse Locator. You can see all the eclipse events, when they occurred and their total duration. These consideration are very important for the sake of Power Budget! Why?

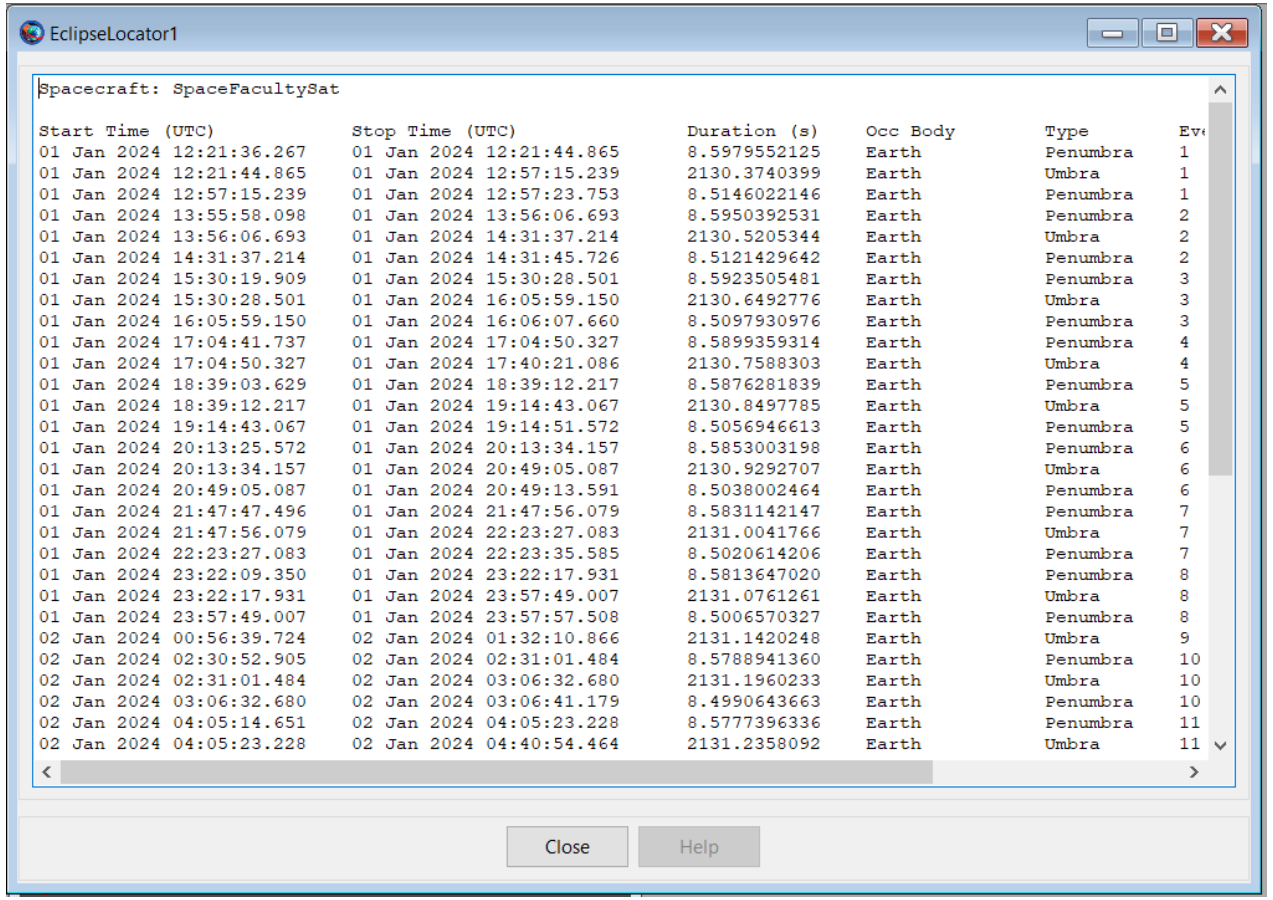

EclipseLocator1

Spacecraft: SpaceFacultySat

Start Time (UTC)	Stop Time (UTC)	Duration (s)	Occ Body	Type	Ev
01 Jan 2024 12:21:36.267	01 Jan 2024 12:21:44.865	8.5979552125	Earth	Penumbra	1
01 Jan 2024 12:21:44.865	01 Jan 2024 12:57:15.239	2130.3740399	Earth	Umbra	1
01 Jan 2024 12:57:15.239	01 Jan 2024 12:57:23.753	8.5146022146	Earth	Penumbra	1
01 Jan 2024 13:55:58.098	01 Jan 2024 13:56:06.693	8.5950392531	Earth	Penumbra	2
01 Jan 2024 13:56:06.693	01 Jan 2024 14:31:37.214	2130.5205344	Earth	Umbra	2
01 Jan 2024 14:31:37.214	01 Jan 2024 14:31:45.726	8.5121429642	Earth	Penumbra	2
01 Jan 2024 15:30:19.909	01 Jan 2024 15:30:28.501	8.5923505481	Earth	Penumbra	3
01 Jan 2024 15:30:28.501	01 Jan 2024 16:05:59.150	2130.6492776	Earth	Umbra	3
01 Jan 2024 16:05:59.150	01 Jan 2024 16:06:07.660	8.5097930976	Earth	Penumbra	3
01 Jan 2024 17:04:41.737	01 Jan 2024 17:04:50.327	8.5899359314	Earth	Penumbra	4
01 Jan 2024 17:04:50.327	01 Jan 2024 17:40:21.086	2130.7588303	Earth	Umbra	4
01 Jan 2024 18:39:03.629	01 Jan 2024 18:39:12.217	8.5876281839	Earth	Penumbra	5
01 Jan 2024 18:39:12.217	01 Jan 2024 19:14:43.067	2130.8497785	Earth	Umbra	5
01 Jan 2024 19:14:43.067	01 Jan 2024 19:14:51.572	8.5056946613	Earth	Penumbra	5
01 Jan 2024 20:13:25.572	01 Jan 2024 20:13:34.157	8.5853003198	Earth	Penumbra	6
01 Jan 2024 20:13:34.157	01 Jan 2024 20:49:05.087	2130.9292707	Earth	Umbra	6
01 Jan 2024 20:49:05.087	01 Jan 2024 20:49:13.591	8.5038002464	Earth	Penumbra	6
01 Jan 2024 21:47:47.496	01 Jan 2024 21:47:56.079	8.5831142147	Earth	Penumbra	7
01 Jan 2024 21:47:56.079	01 Jan 2024 22:23:27.083	2131.0041766	Earth	Umbra	7
01 Jan 2024 22:23:27.083	01 Jan 2024 22:23:35.585	8.5020614206	Earth	Penumbra	7
01 Jan 2024 23:22:09.350	01 Jan 2024 23:22:17.931	8.5813647020	Earth	Penumbra	8
01 Jan 2024 23:22:17.931	01 Jan 2024 23:57:49.007	2131.0761261	Earth	Umbra	8
01 Jan 2024 23:57:49.007	01 Jan 2024 23:57:57.508	8.5006570327	Earth	Penumbra	8
02 Jan 2024 00:56:39.724	02 Jan 2024 01:32:10.866	2131.1420248	Earth	Umbra	9
02 Jan 2024 02:30:52.905	02 Jan 2024 02:31:01.484	8.5788941360	Earth	Penumbra	10
02 Jan 2024 02:31:01.484	02 Jan 2024 03:06:32.680	2131.1960233	Earth	Umbra	10
02 Jan 2024 03:06:32.680	02 Jan 2024 03:06:41.179	8.4990643663	Earth	Penumbra	10
02 Jan 2024 04:05:14.651	02 Jan 2024 04:05:23.228	8.5777396336	Earth	Penumbra	11
02 Jan 2024 04:05:23.228	02 Jan 2024 04:40:54.464	2131.2358092	Earth	Umbra	11

Close Help

How to find events - 7

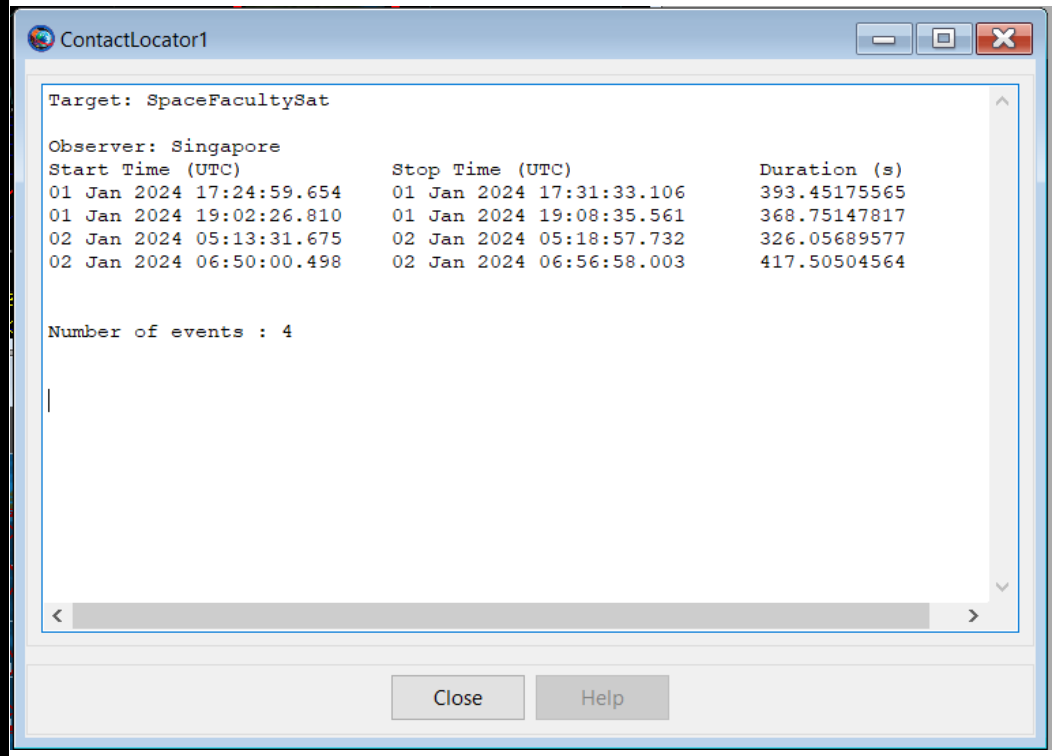

If you double-click on the Contact Locator, you can see when the satellite was able to communicate with the ground station and for how long.

This is important both to send commands to the satellite and to receive data from the spacecraft.

2NDSpace

Build your first constellation - 1

Now that we have made our first mission analysis, it is time to double-up!

We have seen that constellation are very useful in the real world, so we need to learn how to set them up in the software.

First of all, right click on the SpaceFacultySat and click clone. Now you have two spacecrafts!

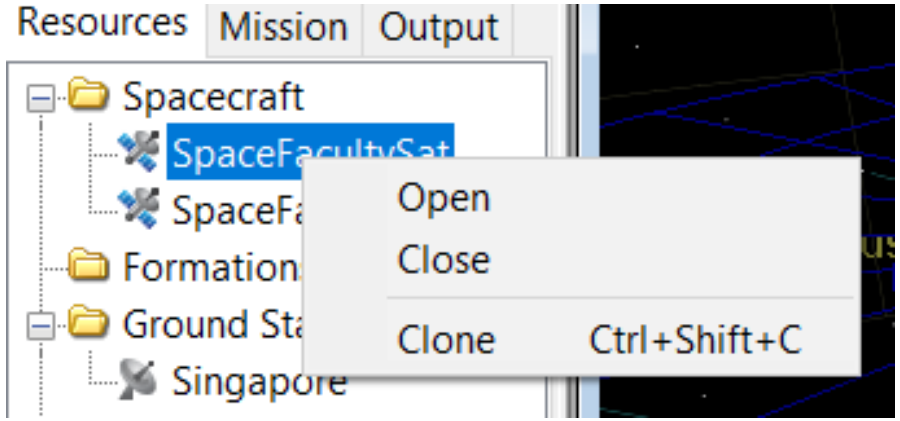

Build your first constellation - 2

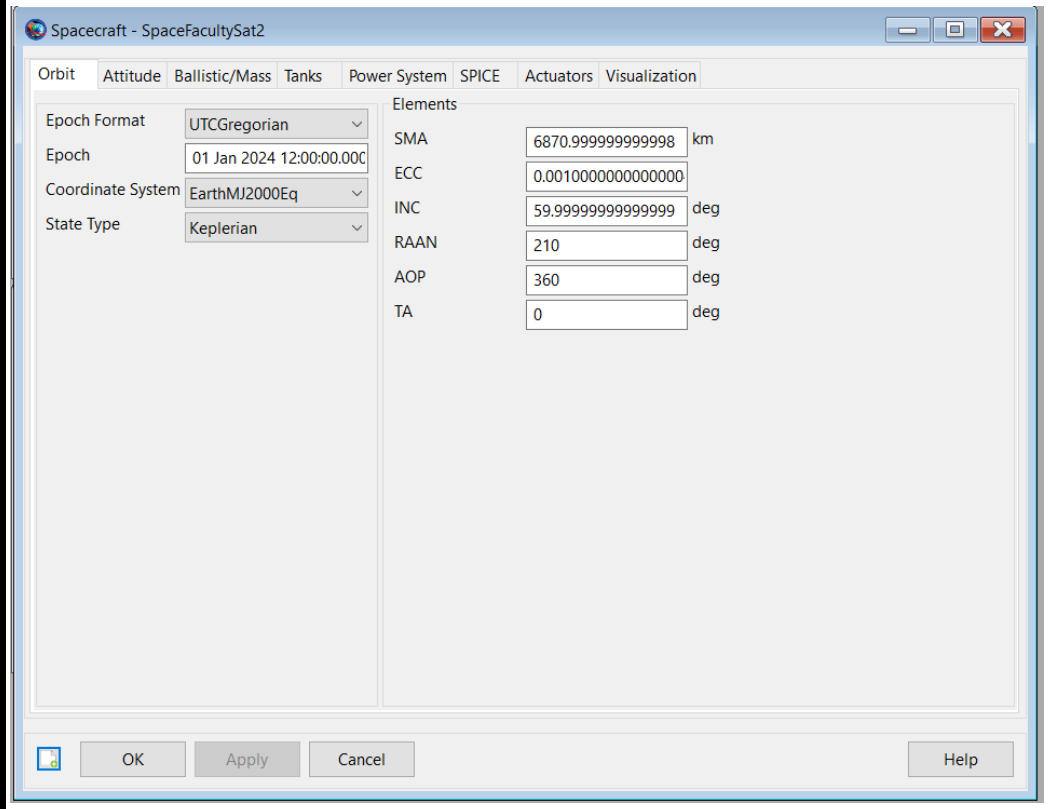

Set the RAAN of the new satellite to be 210 deg.

Usually, in real constellation satellites have different RAANs, so that the orbits are in different planes.

If a constellation is made of a great number of satellites, some of them are following each other (at a safe distance!) on the same orbit.

Build your first constellation - 3

If you run the simulation now, you will see no changes even if we have added our satellite. Why? We need to tell GMAT to include it in our output and propagation commands.

First, edit the DefaultOrbitView and DefaultGroundTrackPlot to include both the spacecrafts.

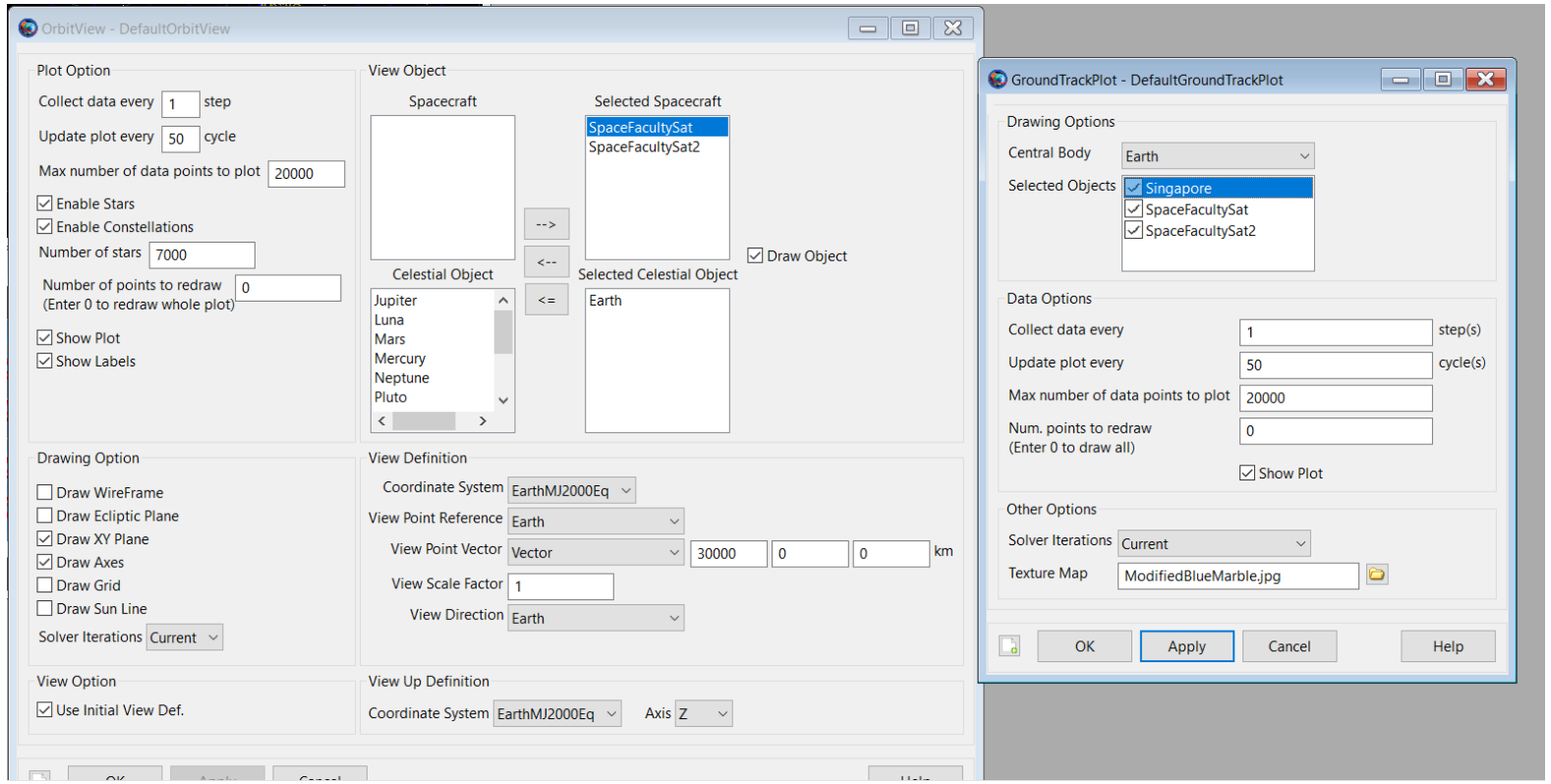

SPACE FACULTY
2NDSpace

Build your first constellation - 4

Now we need to tell GMAT that it has also to propagate this new satellite. So, we go in the Mission Tab and we add SpaceFacultySat2 to the Spacecraft List.

Now everything is ready, and you can Run the mission!

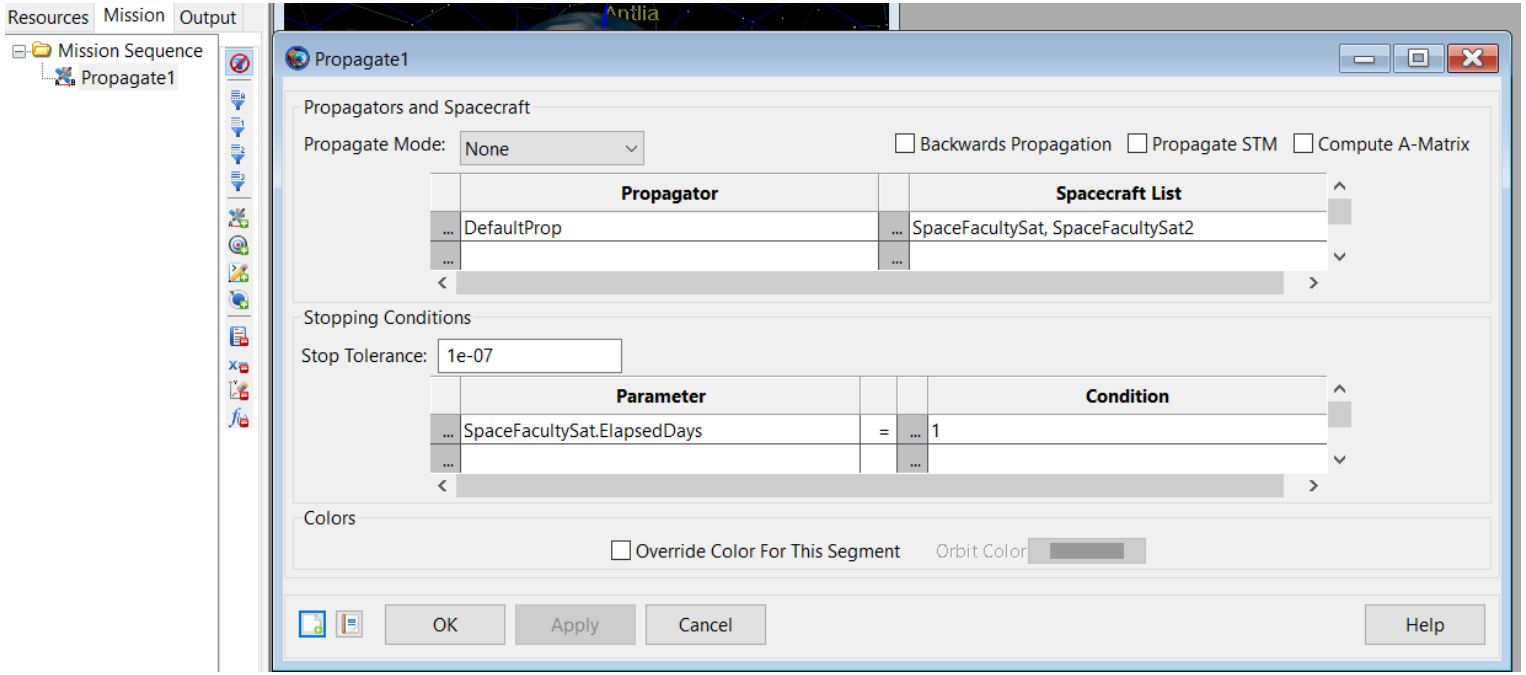

Build your first constellation - 5

Now you simulated also a constellation!

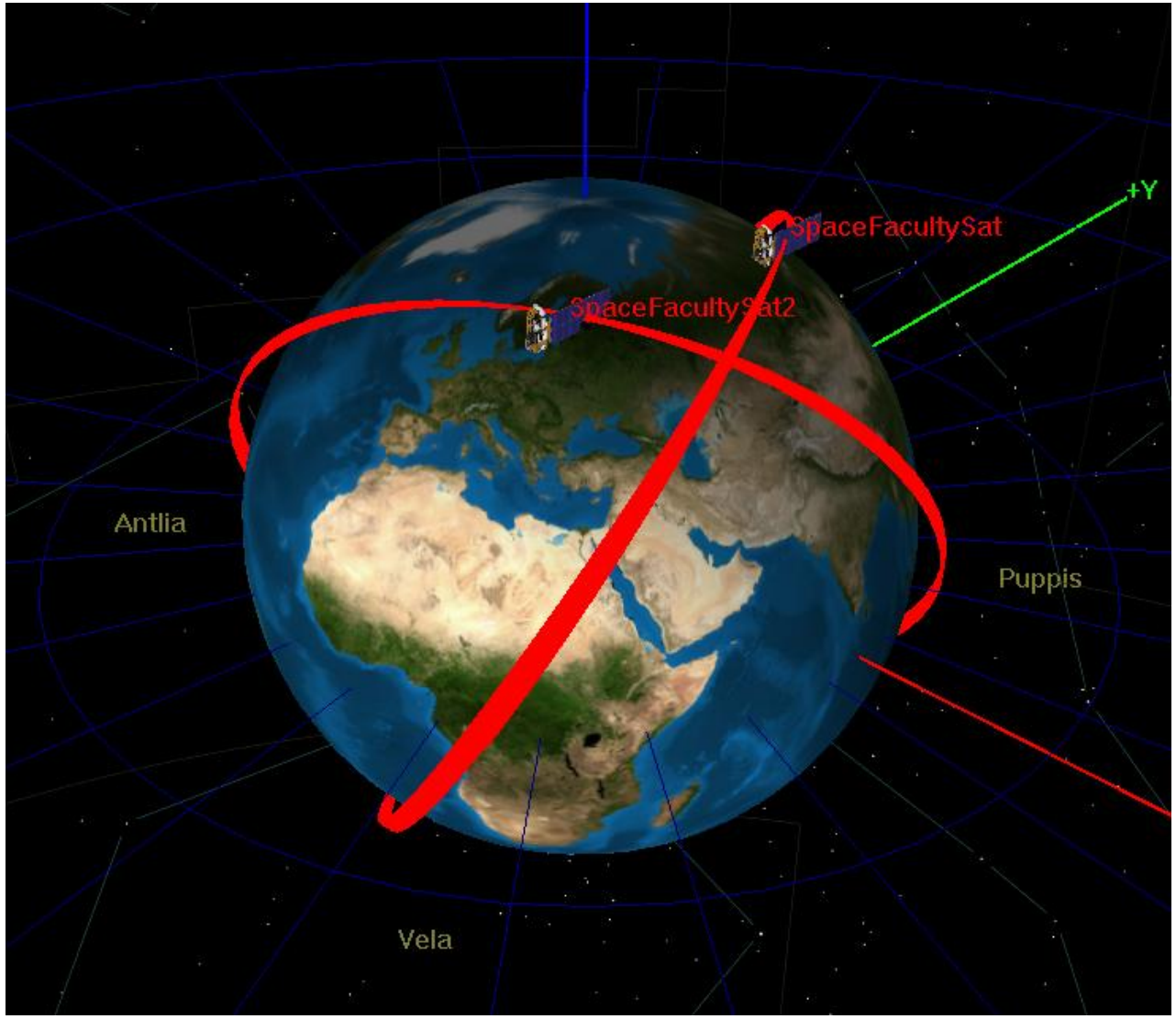

2NDSpace

Exercise - 2

- If you try to add the second spacecraft we have created to our Events Locators, you notice that you can't add two of them in a single Locator. Try to set up two more Events Locators for the new satellite, in order to have Eclipse and Ground Contact data also for the new satellite.

- Try to add another Ground Station wherever you want. Note that you can add the new ground station in the event locator!

- Try to add more satellite to the constellation, experimenting with changing RAANs values and TA values.

- Try to set a satellite SMA to 42,164 km and its inclination to 0. What happens to its ground plot? Why?

SPACE FACULTY
2NDSpace